100% DESIGN
FEBRUARY 2026

UPPER DESCHUTES RIVER RESTORATION PROJECT

#20220007

THURSTON COUNTY, WA

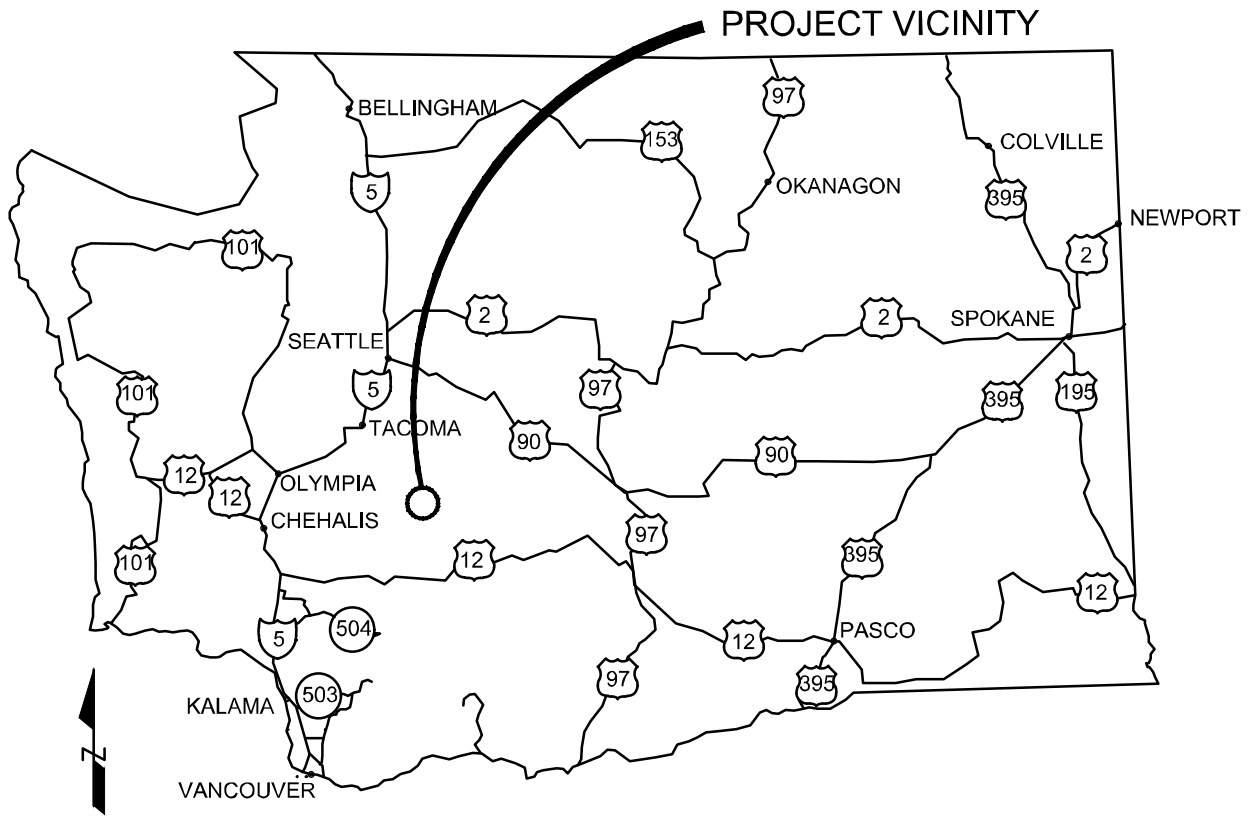

REGIONAL MAP
NTS

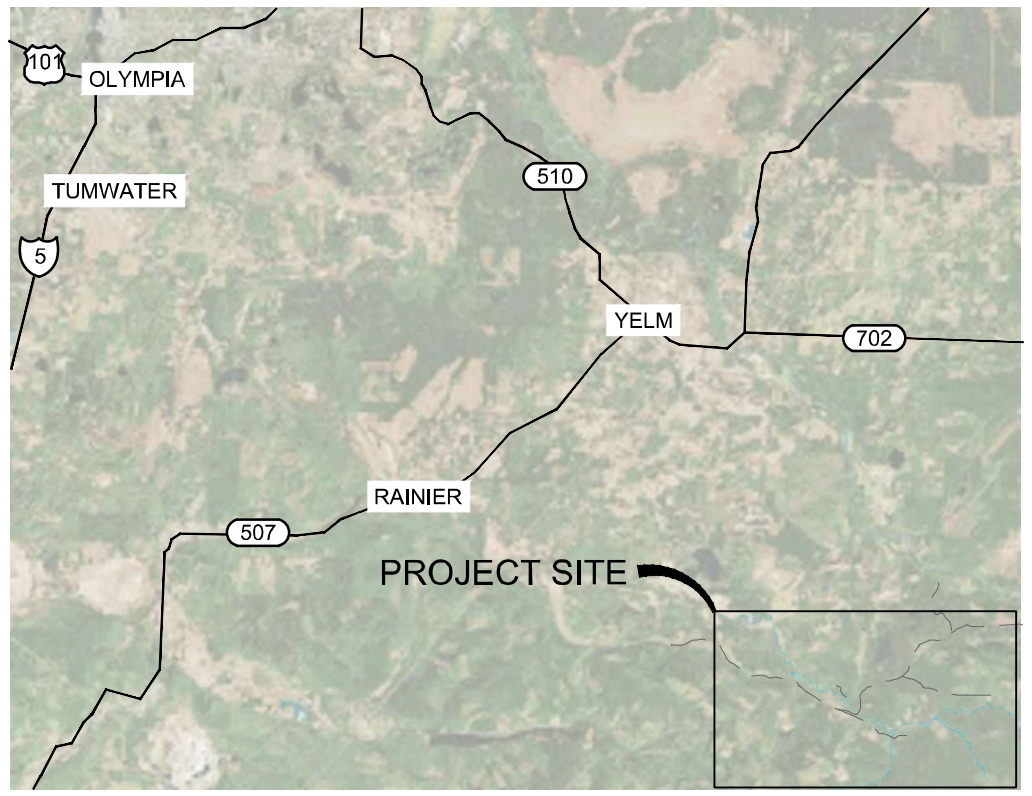

PROJECT VICINITY
NTS

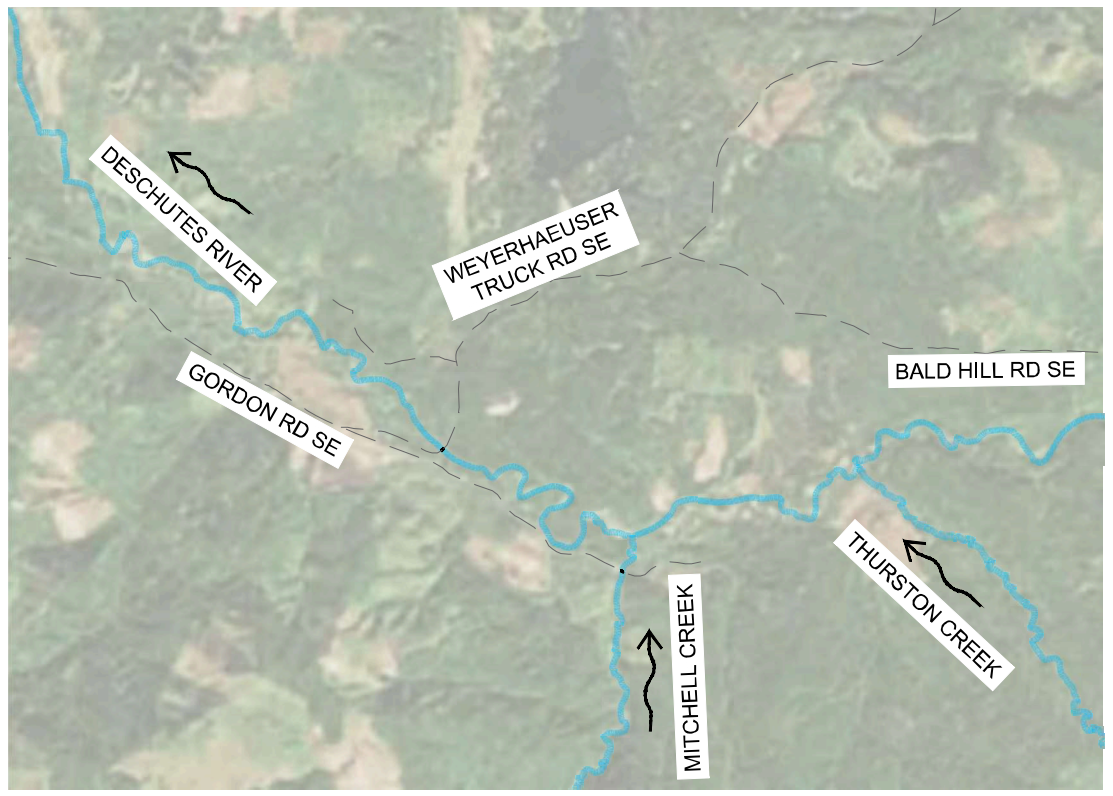

PROJECT SITE
NTS

PROJECT TEAM

PROJECT SPONSOR
SOUTH PUGET SOUND SALMON ENHANCEMENT GROUP
6700 MARTIN WAY E #112
OLYMPIA, WA 98516
360.412.0808

COLE BALDINO, PROJECT MANAGER
coleb@spsseg.org

ENGINEERING CONSULTANT
WOLF WATER RESOURCES, INC.
1001 SE WATER AVE, SUITE #180
PORTLAND, OR 97214
503.207.6688

STEVEN RODRIGUEZ, PE
srodriguez@wolfwaterresources.com

LUCAS EVANS, PE
levans@wolfwaterresources.com

LIZ HAMILTON, EIT
lhamilton@wolfwaterresources.com

PROJECT INFO

SPATIAL REFERENCE
HORIZONTAL: NAD83 WASHINGTON STATE PLANE SOUTH, US SURVEY FT
VERTICAL: NAVD88
LIDAR: WASHINGTON DEPARTMENT OF NATURAL RESOURCES 2022

PROJECT SITE LOCATION:
THURSTON COUNTY, WA
LATITUDE: 46°48'22"N
LONGITUDE: 122°30'00"W
WATERBODY: DESCHUTES RIVER

SHEET INDEX

SHEET NO.	SHEET NAME	SHEET DESCRIPTION
1	C1.0	COVER SHEET
2	C1.1	GENERAL NOTES
3	C2.0	EXISTING CONDITIONS & PLAN OVERVIEW
4	C2.1	DESCHUTES TESC AND ACCESS PLAN 1
5	C2.2	DESCHUTES TESC AND ACCESS PLAN 2
6	C2.3	DESCHUTES TESC AND ACCESS PLAN 3
7	C2.4	MITCHELL CREEK TESC AND ACCESS PLAN
8	C2.5	THURSTON CREEK TESC AND ACCESS PLAN
9	C3.0	DESCHUTES RIVER PLAN - STA 167+00 TO 184+00
10	C3.1	DESCHUTES RIVER PLAN - STA 184+00 TO 204+00
11	C3.2	DESCHUTES RIVER PLAN - STA 204+00 TO 224+00
12	C3.3	DESCHUTES RIVER PLAN - STA 224+00 TO 238+00
13	C3.4	DESCHUTES RIVER PLAN - STA 238+00 TO 256+00
14	C3.5	DESCHUTES RIVER PLAN - STA 256+00 TO 271+00
15	C3.6	DESCHUTES RIVER PLAN - STA 271+00 TO 288+00
16	C3.7	DESCHUTES RIVER PLAN - STA 288+00 TO 310+00
17	C3.8	DESCHUTES RIVER PLAN - STA 310+00 TO 325+00
18	C3.9	DESCHUTES RIVER PLAN - STA 343+00 TO 364+00
19	C3.10	DESCHUTES RIVER PLAN - STA 364+00 TO 384+00
20	C3.11	DESCHUTES RIVER PLAN - STA 384+00 TO 404+00
21	C3.12	DESCHUTES RIVER PLAN - STA 404+00 TO 424+00
22	C3.13	DESCHUTES RIVER PLAN - STA 506+00 TO 523+00
23	C3.14	DESCHUTES RIVER PLAN - STA 523+00 TO 540+00
24	C3.15	DESCHUTES RIVER PLAN - STA 540+00 TO 555+00
25	C3.16	DESCHUTES RIVER PLAN - STA 555+00 TO 573+00
26	C3.17	MITCHELL CREEK PLAN - STA 1000+00 TO 1014+00
27	C3.18	MITCHELL CREEK PLAN - STA 1014+00 TO 1028+00
28	C3.19	MITCHELL CREEK PLAN - STA 1028+00 TO 1043+00
29	C3.20	MITCHELL CREEK PLAN - STA 1043+00 TO 1060+00
30	C3.21	THURSTON CREEK PLAN - STA 2000+00 TO 2014+00
31	C3.22	THURSTON CREEK PLAN - STA 2014+00 TO 2029+00
32	C3.23	THURSTON CREEK PLAN - STA 2029+00 TO 2046+00
33	C3.24	THURSTON CREEK PLAN - STA 2044+00 TO 2061+00
34	C3.25	THURSTON CREEK PLAN - STA 2061+00 TO 2078+00
35	C3.26	THURSTON CREEK PLAN - STA 2078+00 TO 2093+00
36	C3.27	THURSTON CREEK PLAN - STA 2093+00 TO 2112+00
37	C4.0	DESCHUTES RIVER PROFILE STA 165+00 TO 225+0038
38	C4.1	DESCHUTES RIVER PROFILE STA 225+00 TO 285+00
39	C4.2	DESCHUTES RIVER PROFILE STA 285+00 TO 345+00
40	C4.3	DESCHUTES RIVER PROFILE STA 345+00 TO 405+00
41	C4.4	DESCHUTES RIVER PROFILE STA 405+00 TO 539+00
42	C4.5	DESCHUTES RIVER PROFILE STA 539+00 TO 576+00
43	C4.6	MITCHELL CREEK PROFILE STA 1000+00 TO 1060+00
44	C4.7	THURSTON CREEK PROFILE STA 2000+00 TO 2060+00
45	C4.8	THURSTON CREEK PROFILE STA 2060+00 TO 2115+00
46	C4.9	TYPICAL SECTIONS 1
47	C4.10	TYPICAL SECTIONS 2
48	C4.11	TYPICAL SECTIONS 3
49	C4.12	TYPICAL SECTIONS 4
50	C5.0	WHS TYPE 1 & 2 TYPICAL DETAILS
51	C5.1	WHS TYPE 3 TYPICAL DETAILS
52	C5.2	WHS TYPE 4 & 5 TYPICAL DETAILS
53	C5.3	WHS TYPE 6 TYPICAL DETAILS
54	C5.4	WHS TYPE 7 TYPICAL DETAILS
55	C5.5	WHS TYPE 8 TYPICAL DETAILS
56	C5.6	WHS TYPE 9 TYPICAL DETAILS
57	C5.7	WHS TYPE 10 TYPICAL DETAIL
58	C5.8	TESC TYPICAL DETAILS

PRELIMINARY
NOT FOR
CONSTRUCTION

WOLF WATER RESOURCES, INC.
1001 SE WATER AVE, SUITE #180
PORTLAND, OR 97214
503.207.6688

SOUTH PUGET SOUND SALMON
ENHANCEMENT GROUP
6700 MARTIN WAY E #112
OLYMPIA, WA 98516
360.412.0808

SOUTH PUGET SOUND SALMON
ENHANCEMENT GROUP

UPPER DESCHUTES RIVER
RESTORATION PROJECT

THURSTON COUNTY, WA

COVER SHEET

REVISION NUMBER

No.	Date	Revision

Date 2/19/2026	Designed By LE/SR
Drawn By LH/BF	Checked By SR/GL

SCALE
0 1"

JOB NO.
20220007

SHEET NO.
C1.0
1 OF 58

GENERAL NOTES:

1. EXISTING CONDITIONS TOPOGRAPHY IS DERIVED FROM WA DNR WALI 2022 LIDAR.
2. HORIZONTAL DATUM IS NAD83 WASHINGTON STATE PLANE SOUTH, US SURVEY FT.
3. VERTICAL DATUM IS NAVD88, FT.
4. ALL SCALES SHOWN ARE FOR 22" X 34" SHEETS.
5. ALL EQUIPMENT SHALL BE WASHED PRIOR TO MOBILIZATION TO THE SITE TO MINIMIZE THE INTRODUCTION OF FOREIGN MATERIALS AND FLUIDS TO THE PROJECT SITE. ALL EQUIPMENT SHALL BE FREE OF OIL, HYDRAULIC FLUID, AND DIESEL FUEL LEAKS. TO PREVENT INVASION OF NOXIOUS WEEDS OR THE SPREAD OF WHIRLING DISEASE SPORES, ALL EQUIPMENT SHALL BE CLEANED TO REMOVE MUD AND SOIL PRIOR TO MOBILIZATION INTO THE PROJECT AREA. IT WILL BE THE CONTRACTOR'S RESPONSIBILITY TO INSURE THAT THESE AND ANY ADDITIONAL POLLUTION CONTROL MEASURES HAVE BEEN TAKEN PER THE SPECIFICATIONS.
6. THERE WILL BE A SCHEDULED TIME FOR INSPECTION OF ALL EQUIPMENT THAT IS MOBILIZED TO THE SITE BY THE ENGINEER OR OWNER'S REPRESENTATIVE.
7. ALL WORK SHALL CONFORM TO THE PLANS & SPECIFICATIONS UNLESS INDICATED OTHERWISE BY CONTRACT DOCUMENTS.
8. DRIVING DIRECTIONS:
    - FROM OLYMPIA, MERGE ONTO I-5 NORTH
    - TAKE EXIT 109 TOWARD MARTIN WAY
    - TURN ONTO KINWOOD ST SE
    - TURN LEFT ONTO PACIFIC AVE SE
    - CONTINUE STRAIGHT ONTO WA-510 E
    - AFTER APPROX 10 MILES MERGE ONTO YELM HWY SE
    - AFTER APPROX 3 MILES TURN RIGHT ONTO BALD HILL RD SE
    - AFTER APPROX 5 MILES TURN LEFT TO STAY ON BALD HILL RD SE
    - TURN RIGHT ONTO WEYERHAUSER TRUCK RD SE TO ACCESS PROJECT SITE

CONSTRUCTION ACCESS/TRAFFIC CONTROL:

1. CONTRACTOR SHALL SUBMIT AN ACCESS, STAGING , AND STOCKPILE PLAN FOR APPROVAL MINIMUM 3 WEEKS PRIOR TO MOBILIZATION.
2. APPROVED CONTRACTOR STAGING AREAS ARE SHOWN ON SHEET C2.1 THROUGH C5.8.
3. ACCESS TO/ALONG ROADWAYS SHALL BE MAINTAINED AT ALL TIMES.
4. THE CONTRACTOR IS SOLELY RESPONSIBLE FOR OBTAINING ANY REQUIRED TRAFFIC CONTROL OR ACCESS PERMITS.
5. ALL EQUIPMENT, MATERIALS, AND PERSONNEL SHALL REMAIN WITHIN THE WORK AREA BOUNDARY.
6. THE CONTRACTOR SHALL KEEP THE WORK AREAS IN NEAT CONDITION, FREE OF DEBRIS AND LITTER FOR THE DURATION OF THE PROJECT.
7. ACCESS ROUTES OTHER THAN ESTABLISHED ROADS SHALL NOT BE CLEARED OR GRADED.
8. ALL DISTURBED AREAS INCLUDING ROADS, DRIVEWAYS AND ACCESS ROUTES SHALL BE RESTORED TO ORIGINAL CONDITION OR BETTER. AREAS SHALL BE REVEGETATED PER PLANS.
9. ALL DISTURBED AREAS OUTSIDE THE LIMITS OF DISTURBANCE SHALL BE RESTORED TO ORIGINAL CONDITION OR BETTER AT NO ADDITIONAL COST TO THE OWNER.

WORK PERIODS:

1. ALL IN-WATER WORK SHALL BE LIMITED TO WDFW APPROVED IN-WATER WINDOW OF JULY 16TH - AUGUST 31ST.

UTILITIES:

1. CONTRACTOR SHALL BE SOLELY RESPONSIBLE FOR HAVING UTILITIES LOCATED PRIOR TO CONSTRUCTION ACTIVITIES.
2. THE CONTRACTOR SHALL CALL 800-322-2344 FOR UTILITY LOCATE PRIOR TO CONSTRUCTION.
3. THE CONTRACTOR SHALL IMMEDIATELY CONTACT THE AFFECTED UTILITY SERVICE TO REPORT ANY DAMAGED OR DESTROYED UTILITIES.
4. THE CONTRACTOR SHALL PROVIDE EQUIPMENT AND LABOR TO AID THE EFFECTED UTILITY SERVICE IN REPAIRING DAMAGED OR DESTROYED UTILITIES AT NO ADDITIONAL COST.

LEGEND AND SYMBOLS

EXISTING CONTOUR - 5' INTERVAL
EXISTING CONTOUR - 25' INTERVAL
THURSTON COUNTY TAX LOTS
THURSTON COUNTY ROAD CENTERLINE
EXISTING ACCESS ROADS
FEMA REGULATORY FLOODWAY
ORDINARY HIGH WATER
EXISTING DRAINAGE
RIVER/CREEK CENTERLINE
FEMA 100-YEAR FLOODPLAIN
TYPICAL LOW FLOW EXTENTS
STAGING/PARKING AREA
EXISTING TREE (60-90 FT HEIGHT)
EXISTING TREE (90-120 FT HEIGHT)
EXISTING TREE (120-150 FT HEIGHT)
EXISTING TREE (150-200 FT HEIGHT)
Ⓧ WHS TYPE
XXX TREE ID
LAYER 1 TIPPED TREE
LAYER 2 TIPPED TREE
LAYER 3 TIPPED TREE
LAYER 4 TIPPED TREE
LAYER 5 TIPPED TREE
LAYER 6 TIPPED TREE
LAYER 7 TIPPED TREE
APPROX. HAND CREW ACCESS ROUTE
WATTLES
REPLANTING ZONE

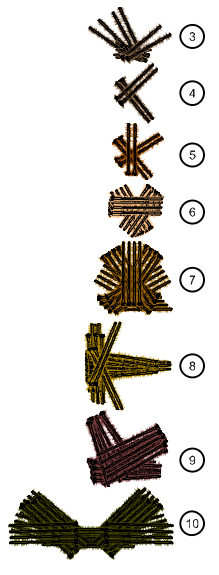

WHS TYPE 3
WHS TYPE 4
WHS TYPE 5
WHS TYPE 6
WHS TYPE 7
WHS TYPE 8
WHS TYPE 9
WHS TYPE 10

HELICOPTER WHS SCHEDULES:

WHS TYPE	WHS #	WHS QTY	MATERIALS PER STRUCTURE		TOTAL MATERIALS	
			FULL TREE	RACKING LOG	FULL TREE	RACKING LOG
LOOSE WOOD	-	5	1	-	5	-
DISPERSED TRIBUTARY HELICOPTER WOOD PLACEMENT	2	-	MITCHELL CREEK		404	1206
			4 FULL TREE/ 100 FT	12 RACKING LOGS/ 100 FT		
			THURSTON CREEK			
			2 FULL TREE/ 100 FT	6 RACKING LOGS/ 100 FT		
TRIBUTARY JAM	3	19	10	24	190	456
FLOODPLAIN JAM	4	21	4	12	84	252
SMALL JAM	5	3	6	18	18	54
MODERATE FLOODPLAIN JAM	6	6	16	30	96	180
MARGIN JAM	7	28	30	42	840	1176
APEX JAM	8	16	34	72	544	1152
DEFLECTOR JAM	9	8	32	60	256	480
CHANNEL SPANNING JAM	10	2	56	84	112	168
TOTAL JAM QUANTITIES (WHS 3-10)		**103**	-	-	**2549**	**5124**

HELICOPTER WHS SUMMARY TABLE:

WHS TYPE	WHS #	WHS QUANTITY		
		DESCHUTES RIVER	THURSTON CREEK	MITCHELL CREEK
LOOSE HELICOPTER WOOD (FULL TREES)	-	5	-	-
DISPERSED TRIBUTARY HELICOPTER WOOD PLACEMENT (FULL TREES)	2	-	174	230
TRIBUTARY JAM	3	-	11	8
FLOODPLAIN JAM	4	21	-	-
SMALL JAM	5	3	-	-
MODERATE FLOODPLAIN JAM	6	6	-	-
MARGIN JAM	7	28	-	-
APEX JAM	8	16	-	-
DEFLECTOR JAM	9	8	-	-
CHANNEL SPANNING JAM	10	2	-	-
TOTAL JAM QUANTITIES (WHS 3-10)		**84**	**11**	**8**

TREE SUMMARY TABLE:

DBH RANGE	TIPPED*			
	QUANTITY			TOTAL
	DESCHUTES RIVER	THURSTON CREEK	MITCHELL CREEK	
<24"	27	2	4	**33**
24-36"	62	9	4	**75**
FIELD FIT/ UNAVAILABLE***	71	9	0	**80**
TOTAL PER REACH	**160**	**20**	**8**	**188**

DBH RANGE	CUT**			
	QUANTITY			TOTAL
	DESCHUTES RIVER	THURSTON CREEK	MITCHELL CREEK	
<24"	17	11	6	**34**
24-36"	17	5	16	**38**
36-54"	12	0	4	**16**
>54"	17	0	0	**17**
FIELD FIT/ UNAVAILABLE***	28	76	11	**115**
ALDERS	6	224	90	**320**
TOTAL PER REACH	**97**	316	127	540

* TIPPED TREES SHALL BE FULL TREES TIPPED BY CABLE AND PULLEY SYSTEM WITH ROOTWAD AND BRANCHES INTACT.
** CUT TREES SHALL BE FELLED BY SAW WITH BRANCHES INTACT.
*** FIELD FIT TREES SHALL BE TIPPED INTO CHANNEL BY MEANS (TIPPED/CUT) IDENTIFIED IN PLANS. TREE SIZES FOR FIELD FIT TREES ARE ASSUMED TO BE <36" DBH UNLESS SPECIFIED OTHERWISE ON PLANS.

ABBREVIATIONS:

APPROX	APPROXIMATE
APE	APPROXIMATE PROJECT EXTENTS
BMP	BEST MANAGEMENT PRACTICE
CAR	CONTRACTING AGENCY REPRESENTATIVE
CFS	CUBIC FEET PER SECOND
CL	CENTERLINE
CY	CUBIC YARD
DBH	DIAMETER AT BREAST HEIGHT
EG	EXISTING GRADE/GROUND
ELEV, EL	ELEVATION
ESC	EROSION AND SEDIMENT CONTROL
EX, EXIST	EXISTING
FEMA	FEDERAL EMERGENCY MANAGEMENT AGENCY
FG	FINISHED GRADE/GROUND
FT	FEET
HELI	HELICOPTER
IN	INCHES
IE	INVERT ELEVATION
MIN	MINIMUM
NAD83	NORTH AMERICAN DATUM (1983)
NAVD88	NORTH AMERICAN VERTICAL DATUM (1988)
NTS	NOT TO SCALE
OHW	ORDINARY HIGH WATER
PROP	PROPOSED
QTY	QUANTITY
STA	STATION
SEQ	SEQUENCING
SPSSEG	SOUTH PUGET SOUND SALMON ENHANCEMENT GROUP
TESC	TEMPORARY EROSION AND SEDIMENT CONTROL
TOE	TOE OF SLOPE
TOP	TOP OF SLOPE
TYP	TYPICAL
W/	WITH
WA	WASHINGTON
DNR	DEPARTMENT OF NATURAL RESOURCES
WDFW	WASHINGTON DEPARTMENT OF FISH & WILDLIFE
WHS	WOOD HABITAT STRUCTURE
WSE	WATER SURFACE ELEVATION

100% DESIGN
FEBRUARY 2026

STEVEN RODRIGUEZ
PRELIMINARY NOT FOR CONSTRUCTION

WOLF WATER RESOURCES, INC.
1001 SE WATER AVE, SUITE #180
PORTLAND, OR 97214
503.207.6688

SOUTH PUGET SOUND SALMON
ENHANCEMENT GROUP
6700 MARTIN WAY E #112
OLYMPIA, WA 98516
360.412.0808

SOUTH PUGET SOUND SALMON
ENHANCEMENT GROUP
UPPER DESCHUTES RIVER RESTORATION PROJECT
THURSTON COUNTY, WA

GENERAL NOTES

REVISION NUMBER

No.	Date	Revision

Date 2/19/2026	Designed By LE/SR
Drawn By LH/BF	Checked By SR/GL

SCALE
0 1"

JOB NO.
20220007

SHEET NO.
C1.1
2 OF 58

100% DESIGN
FEBRUARY 2026

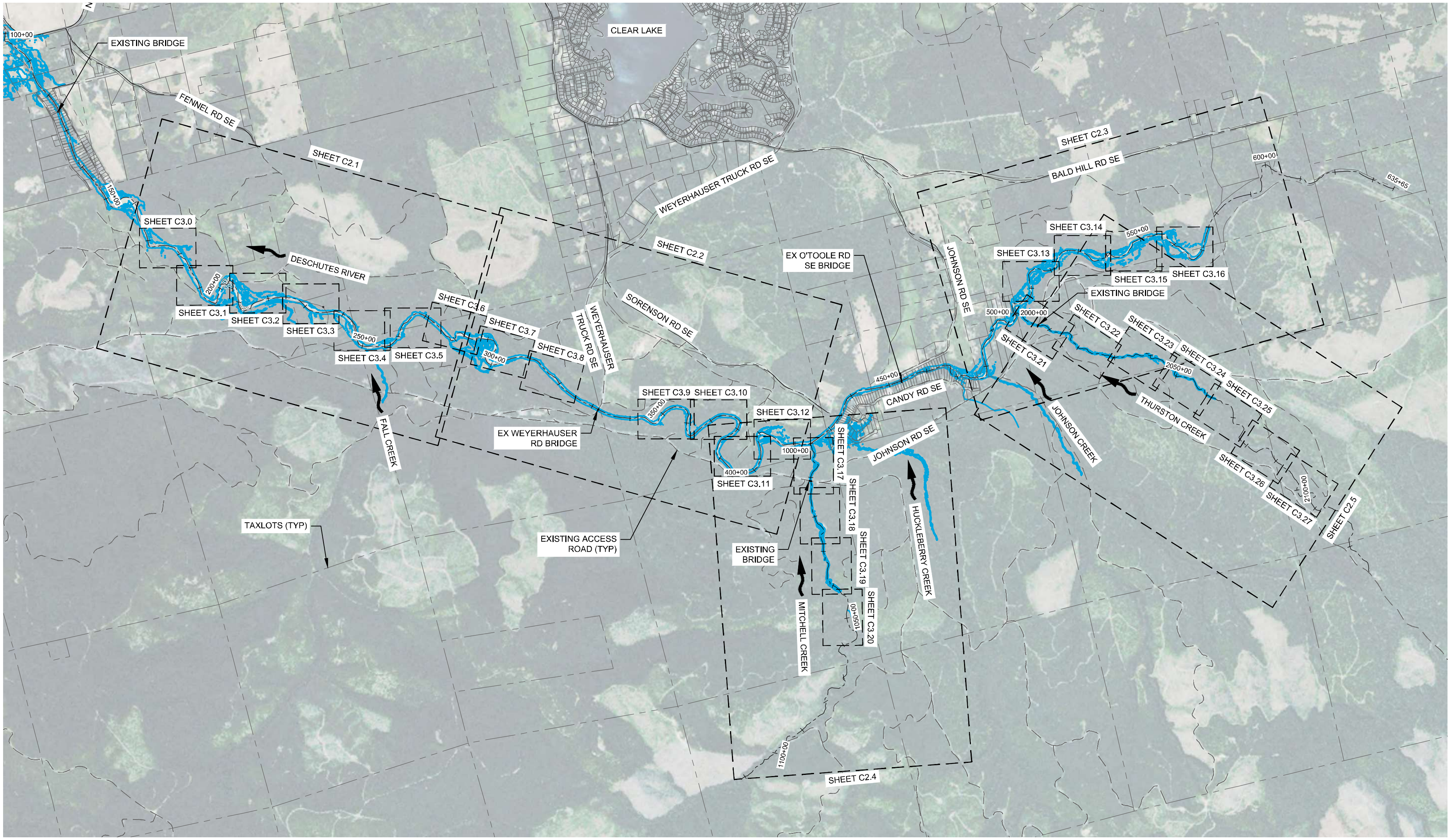
100+00
EXISTING BRIDGE
FENNEL RD SE
SHEET C2.1
150+00
SHEET C3.0
DESCHUTES RIVER
200+00
SHEET C3.1
SHEET C3.2
SHEET C3.3
250+00
SHEET C3.4
SHEET C3.5
SHEET C3.6
SHEET C3.7
300+00
SHEET C3.8
FALL CREEK
TAXLOTS (TYP)
CLEAR LAKE
WEYERHAUSER TRUCK RD SE
WEYERHAUSER TRUCK RD SE
SHEET C2.2
SORENSON RD SE
EX WEYERHAUSER RD BRIDGE
EXISTING ACCESS ROAD (TYP)
SHEET C3.9
SHEET C3.10
350+00
400+00
SHEET C3.11
SHEET C3.12
1000+00
EXISTING BRIDGE
SHEET C3.17
SHEET C3.18
SHEET C3.19
SHEET C3.20
1050+00
MITCHELL CREEK
1100+00
SHEET C2.4
EX O'TOOLE RD SE BRIDGE
450+00
CANDY RD SE
JOHNSON RD SE
JOHNSON RD SE
HUCKLEBERRY CREEK
SHEET C2.3
BALD HILL RD SE
600+00
635+65
SHEET C3.13
SHEET C3.14
550+00
SHEET C3.15
SHEET C3.16
EXISTING BRIDGE
500+00
2000+00
SHEET C3.21
SHEET C3.22
SHEET C3.23
SHEET C3.24
2050+00
SHEET C3.25
JOHNSON CREEK
THURSTON CREEK
SHEET C3.26
SHEET C3.27
2100+00
SHEET C2.5

EXISTING CONDITIONS OVERVIEW

NOTES:

1. PARCEL DATA OBTAINED FROM THURSTON COUNTY.
2. AERIAL REFERENCE OBTAINED FROM NAIP 2023.

LEGEND:

— — —	THURSTON COUNTY TAX LOTS
— - —	THURSTON COUNTY ROAD CENTERLINE
— — —	EXISTING ACCESS ROADS
— - - —	RIVER/CREEK CENTERLINE
—	ORDINARY HIGH WATER

N

SCALE
1200 0 600 1200 2400
SCALE FEET

SOUTH PUGET SOUND SALMON ENHANCEMENT GROUP
UPPER DESCHUTES RIVER RESTORATION PROJECT
THURSTON COUNTY, WA

EXISTING CONDITIONS & PLAN OVERVIEW

SOUTH PUGET SOUND SALMON ENHANCEMENT GROUP
6700 MARTIN WAY E #112
OLYMPIA, WA 98516
360.412.0808

WOLF WATER RESOURCES, INC.
1001 SE WATER AVE, SUITE #180
PORTLAND, OR 97214
503.207.6688

PRELIMINARY NOT FOR CONSTRUCTION

REVISION NUMBER

No.	Date	Revision

Date 2/19/2026	Designed By LE/SR
Drawn By LH/BF	Checked By SR/GL

SCALE
0 1"

JOB NO.
20220007

SHEET NO.
C2.0
3 OF 58

DWG: Z:\Shared\W2r\CAD\20220007-Upper Deschutes Conceptual Design\DWG\SHEETS\C2.0 - EXISTING.dwg USER: lhamilton
DATE: Feb 19, 2026 5:01pm XREFS: X-TB-W2r-22x34 X-BASE-MAP X-CREEK X-WET X-LEGEND X-VP

100% DESIGN
FEBRUARY 2026

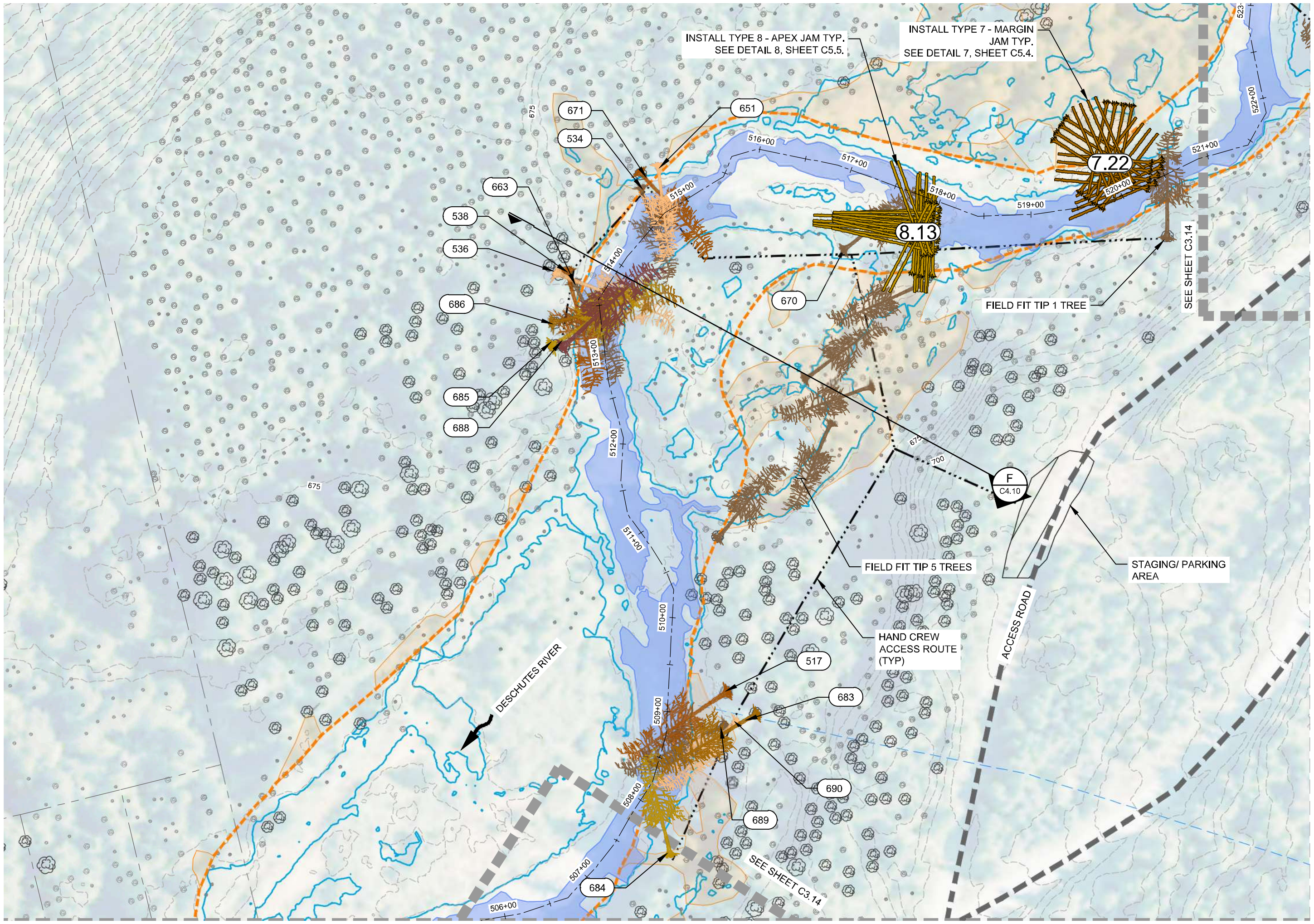
INSTALL TYPE 8 - APEX JAM TYP.
SEE DETAIL 8, SHEET C5.5.
INSTALL TYPE 7 - MARGIN JAM TYP.
SEE DETAIL 7, SHEET C5.4.
7.22
8.13
671
534
651
663
538
536
686
685
688
670
517
683
690
689
684
675
700
506+00
507+00
508+00
509+00
510+00
511+00
512+00
513+00
514+00
515+00
516+00
517+00
518+00
519+00
520+00
521+00
522+00
SEE SHEET C3.14
FIELD FIT TIP 1 TREE
FIELD FIT TIP 5 TREES
HAND CREW ACCESS ROUTE (TYP)
STAGING/ PARKING AREA
ACCESS ROAD
F
C4.10
DESCHUTES RIVER
SEE SHEET C3.14

DESCHUTES RIVER PLAN - STA 506+00 TO 523+00

SCALE

N
60 0 30 60 120
SCALE
FEET

NOTES:

1. EXISTING TREES WITH HEIGHT 0-60 FT NOT DISPLAYED FOR CLARITY.
2. AVOID DISTURBANCE TO AREAS OF EXISTING VEGETATION AS IDENTIFIED BY CAR. PRESERVE EXISTING TREES/VEGETATION IN STAGING AREAS. WHERE DISTURBANCE IS UNAVOIDABLE, SALVAGE AND RE-USE FOR SITE RESTORATION AT DIRECTION OF CAR.
3. TIPPED TREES SHALL BE THOSE IDENTIFIED IN THE PLANS AND TAGGED IN THE FIELD WITH ID TAG UNLESS OTHERWISE DIRECTED BY CAR OR SPECIFIED IN THESE PLANS FOR FIELD FIT. TIPPED TREE JAMS SHALL BE TIPPED IN THE SEQUENCE PROVIDED IN THE TIPPED TREE SUMMARY TABLES IN THESE PLANS.
4. PROPOSED LARGE WOOD SHALL BE PLACED BY ONE OF THE FOLLOWING MEANS AND AS SHOWN IN THESE PLANS:
   - 4.1. HELICOPTER PLACEMENT
   - 4.2. TIPPING UTILIZING CABLE AND PULLEY SYSTEM (TIP)
   - 4.3. FELLED/CUT BY SAW (CUT)
5. LARGE MACHINERY, SUCH AS EXCAVATORS, SHALL NOT BE UTILIZED IN THE RIVER OR WETLANDS, AND SHALL NOT TRAVEL BEYOND ACCESS ROADS/STAGING AREAS IDENTIFIED IN THESE PLANS.

TIPPED TREE SUMMARY

STA REFERENCE	TREE ID TAG #	BANK	AXN	SEQ	DBH RANGE	NOTES
507+65	684	LB	TIP	5	24-36"	
508+90	689	LB	TIP	1	24-36"	
508+90	690	LB	TIP	3	<24"	
508+90	683	LB	TIP	4	24-36"	
509+25	517	LB	TIP	2	24-36"	
513+10	688	RB	TIP	6	24-36"	
513+15	685	RB	TIP	5	24-36"	
513+40	686	RB	TIP	4	24-36"	
514+00	663	RB	TIP	1	24-36"	
513+60	536	RB	TIP	3	24-36"	
513+65	538	RB	TIP	2	24-36"	
522+35	534	RB	TIP	1	<24"	
514+75	671	RB	TIP	2	24-36"	
515+00	651	RB	TIP	3	24-36"	
515+00	-	LB	TIP	-	-	FIELD FIT TIP 5 TREES IN HIGH FLOW CHANNEL
517+25	670	LB	TIP	1	24-36"	
520+25	-	LB	TIP	-	-	FIELD FIT TIP LARGE FIR TREE

HELICOPTER WOOD SUMMARY

STA REFERENCE	WHS TYPE	FULL TREE QTY	RACKING LOG QTY	NOTES
517+50	8.13	34	72	
520+55	7.22	30	42	

LEGEND:

EXISTING CONTOUR - 5' INTERVAL
EXISTING CONTOUR - 25' INTERVAL
THURSTON COUNTY TAX LOTS
EXISTING ACCESS ROADS
FEMA 100-YEAR FLOODWAY
FEMA 100-YEAR FLOODPLAIN
TYPICAL LOW FLOW EXTENTS
ORDINARY HIGH WATER
EXISTING DRAINAGE
STAGING/PARKING AREA
HAND CREW ACCESS ROUTE
EXISTING JAM FOOTPRINT
EXISTING TREE (60-90 FT HEIGHT)
EXISTING TREE (90-120 FT HEIGHT)
EXISTING TREE (120-150 FT HEIGHT)
EXISTING TREE (150-200 FT HEIGHT)

WHS LEGEND:

X	WHS TYPE
XXX	TREE ID
	LAYER 1 TIPPED TREE
	LAYER 2 TIPPED TREE
	LAYER 3 TIPPED TREE
	LAYER 4 TIPPED TREE
	LAYER 5 TIPPED TREE
	LAYER 6 TIPPED TREE
	LAYER 7 TIPPED TREE
▨	TRIBUTARY HELICOPTER WOOD PLACEMENT

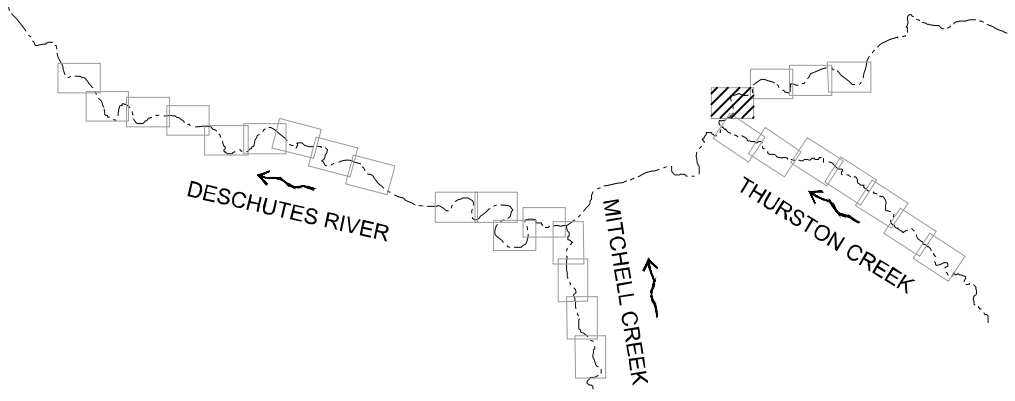
DESCHUTES RIVER
MITCHELL CREEK
THURSTON CREEK

KEY MAP

NTS

STEVEN RODRIGUEZ
PRELIMINARY NOT FOR CONSTRUCTION

WOLF WATER RESOURCES, INC.
1001 SE WATER AVE, SUITE #180
PORTLAND, OR 97214
503.207.6688

SOUTH PUGET SOUND SALMON ENHANCEMENT GROUP
6700 MARTIN WAY E #112
OLYMPIA, WA 98516
360.412.0808

SOUTH PUGET SOUND SALMON ENHANCEMENT GROUP

UPPER DESCHUTES RIVER RESTORATION PROJECT

THURSTON COUNTY, WA

DESCHUTES RIVER PLAN - STA 506+00 TO 523+00

REVISION NUMBER

No.	Date	Revision

Date 2/19/2026	Designed By LE/SR
Drawn By LH/BF	Checked By SR/GL

SCALE 0 1"

JOB NO. 20220007

SHEET NO. C3.13

22 OF 58

DWG: Z:\Shared\W2r\CAD\20220007-Upper Deschutes Conceptual Design\DWG\SHEETS\C3.X - PLAN_1-5.dwg USER: bfasse
DATE: Feb 19, 2026 11:55pm XREFS:X-TB-W2r-22x34 X-BASE-MAP X-CREEK X-PROJECT-UNITS X-EX-TREE X-STAGING X-WHS X-WET X-LEGEND X-KEY-MAP X-AERIAL_1-5 X-HAWS X-RAS_10YR-VELOCITY X-RAS_10YR-DEPTH X-PLANTING X-VP X-LOW-FLOW_INUNDATION

100% DESIGN
FEBRUARY 2026

NOTES:

1. EXISTING TREES WITH HEIGHT 0-60 FT NOT DISPLAYED FOR CLARITY.
2. AVOID DISTURBANCE TO AREAS OF EXISTING VEGETATION AS IDENTIFIED BY CAR. PRESERVE EXISTING TREES/VEGETATION IN STAGING AREAS. WHERE DISTURBANCE IS UNAVOIDABLE, SALVAGE AND RE-USE FOR SITE RESTORATION AT DIRECTION OF CAR.
3. TIPPED TREES SHALL BE THOSE IDENTIFIED IN THE PLANS AND TAGGED IN THE FIELD WITH ID TAG UNLESS OTHERWISE DIRECTED BY CAR OR SPECIFIED IN THESE PLANS FOR FIELD FIT. TIPPED TREE JAMS SHALL BE TIPPED IN THE SEQUENCE PROVIDED IN THE TIPPED TREE SUMMARY TABLES IN THESE PLANS.
4. PROPOSED LARGE WOOD SHALL BE PLACED BY ONE OF THE FOLLOWING MEANS AND AS SHOWN IN THESE PLANS:
   - 4.1. HELICOPTER PLACEMENT
   - 4.2. TIPPING UTILIZING CABLE AND PULLEY SYSTEM (TIP)
   - 4.3. FELLED/CUT BY SAW (CUT)
5. LARGE MACHINERY, SUCH AS EXCAVATORS, SHALL NOT BE UTILIZED IN THE RIVER OR WETLANDS, AND SHALL NOT TRAVEL BEYOND ACCESS ROADS/STAGING AREAS IDENTIFIED IN THESE PLANS.

TIPPED TREE SUMMARY

STA REFERENCE	TREE ID TAG #	BANK	AXN	SEQ	DBH RANGE	NOTES
521+90	-	LB	TIP	-	-	FIELD FIT TIP 1 TREE
523+50	-	RB	CUT	-	36-54"	LARGE DEAD CEDAR
527+00	-	RB	TIP	-	-	FIELD FIT TIP 3-4 TREES
530+00	656	RB	CUT	1	36-54"	
530+25	524	RB	TIP	2	24-36"	
530+90	655	LB	TIP	3	<24"	
531+20	662	LB	TIP	6	24-36"	
531+70	664	LB	TIP	5	<24"	
531+90	523	LB	TIP	4	24-36"	
535+80	-	LB	CUT	-	-	FIELD FIT TIP 2 TREES
536+90	-	LB	CUT	-	-	FIELD FIT TIP 1 TREE

HELICOPTER WOOD SUMMARY

STA REFERENCE	WHS TYPE	FULL TREE QTY	RACKING LOG QTY	NOTES
523+65	7.23	30	42	
527+50	8.14	34	72	
529+00	7.24	30	42	
535+90	10.1	56	84	
536+00	4.18	4	12	
536+75	4.19	4	12	
537+75	6.6	16	30	

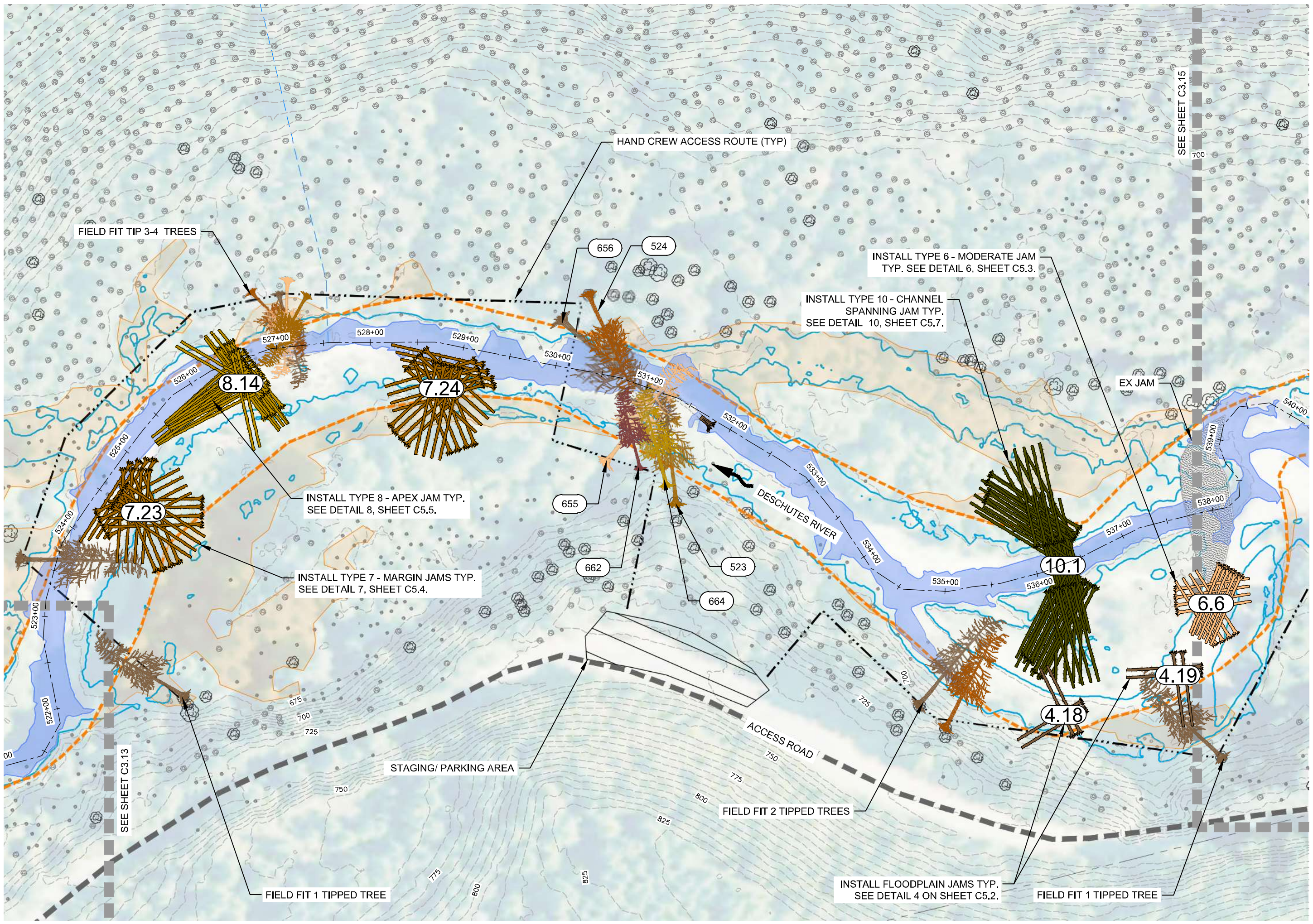

FIELD FIT TIP 3-4 TREES
HAND CREW ACCESS ROUTE (TYP)
656
524
INSTALL TYPE 6 - MODERATE JAM TYP. SEE DETAIL 6, SHEET C5.3.
INSTALL TYPE 10 - CHANNEL SPANNING JAM TYP. SEE DETAIL 10, SHEET C5.7.
EX JAM
SEE SHEET C3.15
8.14
7.24
7.23
10.1
6.6
4.19
4.18
522+00
523+00
524+00
525+00
526+00
527+00
528+00
529+00
530+00
531+00
532+00
533+00
534+00
535+00
536+00
537+00
538+00
539+00
540+00
INSTALL TYPE 8 - APEX JAM TYP. SEE DETAIL 8, SHEET C5.5.
INSTALL TYPE 7 - MARGIN JAMS TYP. SEE DETAIL 7, SHEET C5.4.
655
662
523
664
DESCHUTES RIVER
ACCESS ROAD
STAGING/ PARKING AREA
SEE SHEET C3.13
FIELD FIT 1 TIPPED TREE
FIELD FIT 2 TIPPED TREES
INSTALL FLOODPLAIN JAMS TYP. SEE DETAIL 4 ON SHEET C5.2.
FIELD FIT 1 TIPPED TREE
675
700
725
750
775
800
825
N

DESCHUTES RIVER PLAN - STA 523+00 TO 540+00

SCALE

60 0 30 60 120
SCALE FEET

LEGEND:

- EXISTING CONTOUR - 5' INTERVAL
- EXISTING CONTOUR - 25' INTERVAL
- THURSTON COUNTY TAX LOTS
- EXISTING ACCESS ROADS
- FEMA 100-YEAR FLOODWAY
- FEMA 100-YEAR FLOODPLAIN
- TYPICAL LOW FLOW EXTENTS
- ORDINARY HIGH WATER
- EXISTING DRAINAGE
- STAGING/PARKING AREA
- HAND CREW ACCESS ROUTE
- EXISTING JAM FOOTPRINT
- EXISTING TREE (60-90 FT HEIGHT)
- EXISTING TREE (90-120 FT HEIGHT)
- EXISTING TREE (120-150 FT HEIGHT)
- EXISTING TREE (150-200 FT HEIGHT)

WHS LEGEND:

- ⓧ WHS TYPE
- XXX TREE ID
- LAYER 1 TIPPED TREE
- LAYER 2 TIPPED TREE
- LAYER 3 TIPPED TREE
- LAYER 4 TIPPED TREE
- LAYER 5 TIPPED TREE
- LAYER 6 TIPPED TREE
- LAYER 7 TIPPED TREE
- ▨ TRIBUTARY HELICOPTER WOOD PLACEMENT

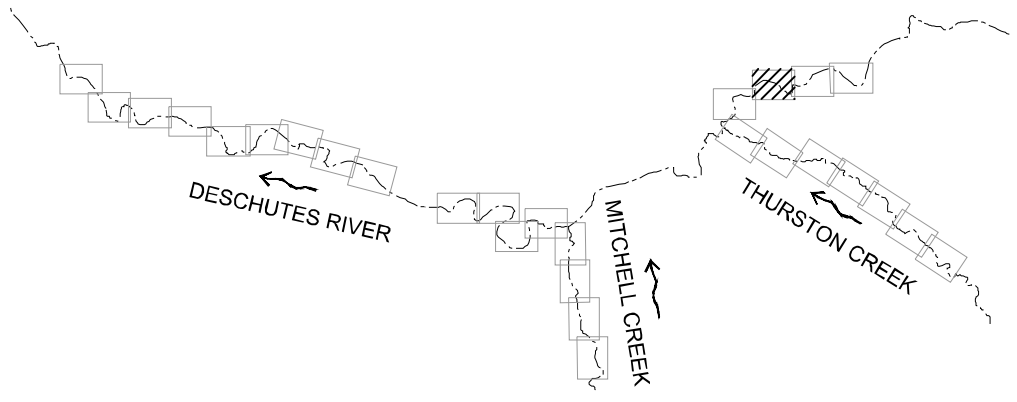

DESCHUTES RIVER
MITCHELL CREEK
THURSTON CREEK

KEY MAP
NTS

STEVEN ROBERT WINTER
PROFESSIONAL ENGINEER
PRELIMINARY NOT FOR CONSTRUCTION

WOLF WATER RESOURCES, INC.
1001 SE WATER AVE, SUITE #180
PORTLAND, OR 97214
503.207.6688

SOUTH PUGET SOUND Salmon ENHANCEMENT GROUP

SOUTH PUGET SOUND SALMON
ENHANCEMENT GROUP
6700 MARTIN WAY E #112
OLYMPIA, WA 98516
360.412.0808

SOUTH PUGET SOUND SALMON
ENHANCEMENT GROUP

UPPER DESCHUTES RIVER RESTORATION PROJECT

THURSTON COUNTY, WA

DESCHUTES RIVER PLAN - STA 523+00 TO 540+00

REVISION NUMBER

No.	Date	Revision

Date 2/20/2026	Designed By LE/SR
Drawn By LH/BF	Checked By SR/GL

SCALE
0 1"

JOB NO.
20220007

SHEET NO.
C3.14
23 OF 58

DWG: Z:\Shared\W2r\CAD\20220007-Upper Deschutes Conceptual Design\DWG\SHEETS\C3.X - PLAN_1-5.dwg USER: bfasse
DATE: Feb 20, 2026 12:24pm XREFS: X-TB-W2r-22x34 X-BASE-MAP X-CREEK X-PROJECT-UNITS X-EX-TREE X-STAGING X-WHS X-WET X-LEGEND X-KEY-MAP X-AERIAL_1-5 X-HAWS X-RAS_10YR-VELOCITY X-RAS_10YR-DEPTH X-PLANTING X-VP X-LOW-FLOW_INUNDATION

100% DESIGN
FEBRUARY 2026

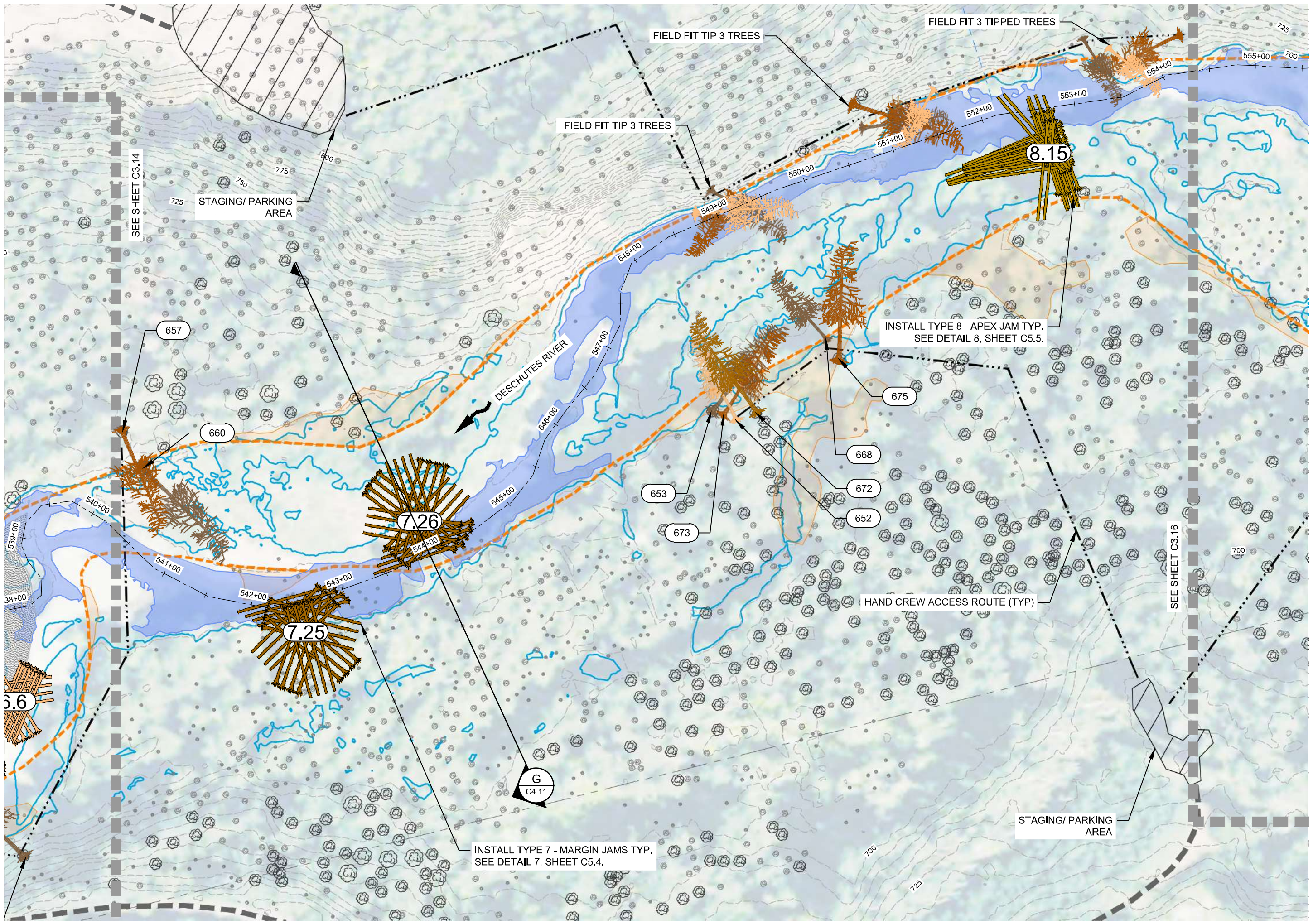

FIELD FIT TIP 3 TREES
FIELD FIT 3 TIPPED TREES
FIELD FIT TIP 3 TREES
STAGING/ PARKING AREA
SEE SHEET C3.14
SEE SHEET C3.16
657
660
653
673
675
668
672
652
7.25
7.26
8.15
5.6
DESCHUTES RIVER
INSTALL TYPE 8 - APEX JAM TYP. SEE DETAIL 8, SHEET C5.5.
INSTALL TYPE 7 - MARGIN JAMS TYP. SEE DETAIL 7, SHEET C5.4.
HAND CREW ACCESS ROUTE (TYP)
STAGING/ PARKING AREA
G
C4.11
539+00
540+00
541+00
542+00
543+00
544+00
545+00
546+00
547+00
548+00
549+00
550+00
551+00
552+00
553+00
554+00
555+00
700
725
750
775
800

DESCHUTES RIVER PLAN - STA 540+00 TO 555+00

SCALE

N
60 0 30 60 120
SCALE
FEET

NOTES:

1. EXISTING TREES WITH HEIGHT 0-60 FT NOT DISPLAYED FOR CLARITY.
2. AVOID DISTURBANCE TO AREAS OF EXISTING VEGETATION AS IDENTIFIED BY CAR. PRESERVE EXISTING TREES/VEGETATION IN STAGING AREAS. WHERE DISTURBANCE IS UNAVOIDABLE, SALVAGE AND RE-USE FOR SITE RESTORATION AT DIRECTION OF CAR.
3. TIPPED TREES SHALL BE THOSE IDENTIFIED IN THE PLANS AND TAGGED IN THE FIELD WITH ID TAG UNLESS OTHERWISE DIRECTED BY CAR OR SPECIFIED IN THESE PLANS FOR FIELD FIT. TIPPED TREE JAMS SHALL BE TIPPED IN THE SEQUENCE PROVIDED IN THE TIPPED TREE SUMMARY TABLES IN THESE PLANS.
4. PROPOSED LARGE WOOD SHALL BE PLACED BY ONE OF THE FOLLOWING MEANS AND AS SHOWN IN THESE PLANS:
   - 4.1. HELICOPTER PLACEMENT
   - 4.2. TIPPING UTILIZING CABLE AND PULLEY SYSTEM (TIP)
   - 4.3. FELLED/CUT BY SAW (CUT)
5. LARGE MACHINERY, SUCH AS EXCAVATORS, SHALL NOT BE UTILIZED IN THE RIVER OR WETLANDS, AND SHALL NOT TRAVEL BEYOND ACCESS ROADS/STAGING AREAS IDENTIFIED IN THESE PLANS.

TIPPED TREE SUMMARY

STA REFERENCE	TREE ID TAG #	BANK	AXN	SEQ	DBH RANGE	NOTES
539+80	657	RB	CUT	2	24-36"	
540+20	660	RB	CUT	1	36-54"	
546+90	653	LB	CUT	1	24-36"	
547+00	673	LB	CUT	2	<24"	
547+00	652	LB	CUT	3	<24"	
547+10	672	LB	CUT	4	24-36"	
549+00	-	RB	CUT	-	-	FIELD FIT TIP 3 TREES
549+50	668	LB	CUT	1	<24"	
546+55	675	LB	CUT	2	24-36"	
551+00	-	RB	CUT	-	-	FIELD FIT TIP 3 TREES
553+75	-	RB	CUT	-	-	FIELD FIT TIP 3 TREES

HELICOPTER WOOD SUMMARY

STA REFERENCE	WHS TYPE	FULL TREE QTY	RACKING LOG QTY	NOTES
542+30	7.25	30	42	
544+00	7.26	30	42	
552+75	8.15	34	72	INSTALL AT HEAD OF ISLAND

LEGEND:

EXISTING CONTOUR - 5' INTERVAL
EXISTING CONTOUR - 25' INTERVAL
THURSTON COUNTY TAX LOTS
EXISTING ACCESS ROADS
FEMA 100-YEAR FLOODWAY
FEMA 100-YEAR FLOODPLAIN
TYPICAL LOW FLOW EXTENTS
ORDINARY HIGH WATER
EXISTING DRAINAGE
STAGING/PARKING AREA
HAND CREW ACCESS ROUTE
EXISTING JAM FOOTPRINT
EXISTING TREE (60-90 FT HEIGHT)
EXISTING TREE (90-120 FT HEIGHT)
EXISTING TREE (120-150 FT HEIGHT)
EXISTING TREE (150-200 FT HEIGHT)

WHS LEGEND:

Ⓧ WHS TYPE
XXX TREE ID
LAYER 1 TIPPED TREE
LAYER 2 TIPPED TREE
LAYER 3 TIPPED TREE
LAYER 4 TIPPED TREE
LAYER 5 TIPPED TREE
LAYER 6 TIPPED TREE
LAYER 7 TIPPED TREE
▨ TRIBUTARY HELICOPTER WOOD PLACEMENT

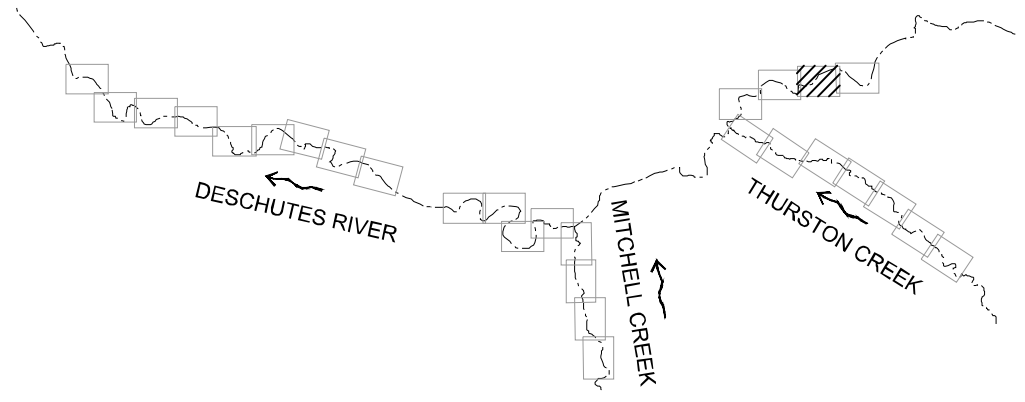

DESCHUTES RIVER
MITCHELL CREEK
THURSTON CREEK

KEY MAP
NTS

STEVEN RODRIGUEZ
PRELIMINARY NOT FOR CONSTRUCTION

WOLF WATER RESOURCES, INC.
1001 SE WATER AVE, SUITE #180
PORTLAND, OR 97214
503.207.6688

SOUTH PUGET SOUND SALMON ENHANCEMENT GROUP
6700 MARTIN WAY E #112
OLYMPIA, WA 98516
360.412.0808

SOUTH PUGET SOUND SALMON ENHANCEMENT GROUP

UPPER DESCHUTES RIVER RESTORATION PROJECT

THURSTON COUNTY, WA

DESCHUTES RIVER PLAN - STA 540+00 TO 555+00

REVISION NUMBER

No.	Date	Revision

Date 2/20/2026	Designed By LE/SR
Drawn By LH/BF	Checked By SR/GL

SCALE 0 1"

JOB NO. 20220007

SHEET NO. C3.15

24 OF 58

DWG: Z:\Shared\W2r\CAD\20220007-Upper Deschutes Conceptual Design\DWG\SHEETS\C3.X - PLAN_1-5.dwg USER: bfasse
DATE: Feb 20, 2026 12:55am XREFS:X-TB-W2r-22x34 X-BASE-MAP X-CREEK X-PROJECT-UNITS X-EX-TREE X-STAGING X-WHS X-WET X-LEGEND X-KEY-MAP X-AERIAL_1-5 X-HAWS X-RAS_10YR-VELOCITY X-RAS_10YR-DEPTH X-PLANTING X-VP X-LOW-FLOW_INUNDATION

NOTES:

1. EXISTING TREES WITH HEIGHT 0-60 FT NOT DISPLAYED FOR CLARITY.
2. AVOID DISTURBANCE TO AREAS OF EXISTING VEGETATION AS IDENTIFIED BY CAR, PRESERVE EXISTING TREES/VEGETATION IN STAGING AREAS. WHERE DISTURBANCE IS UNAVOIDABLE, SALVAGE AND RE-USE FOR SITE RESTORATION AT DIRECTION OF CAR.
3. TIPPED TREES SHALL BE THOSE IDENTIFIED IN THE PLANS AND TAGGED IN THE FIELD WITH ID TAG UNLESS OTHERWISE DIRECTED BY CAR OR SPECIFIED IN THESE PLANS FOR FIELD FIT. TIPPED TREE JAMS SHALL BE TIPPED IN THE SEQUENCE PROVIDED IN THE TIPPED TREE SUMMARY TABLES IN THESE PLANS.
4. PROPOSED LARGE WOOD SHALL BE PLACED BY ONE OF THE FOLLOWING MEANS AND AS SHOWN IN THESE PLANS:
    - 4.1. HELICOPTER PLACEMENT
    - 4.2. TIPPING UTILIZING CABLE AND PULLEY SYSTEM (TIP)
    - 4.3. FELLED/CUT BY SAW (CUT)
5. LARGE MACHINERY, SUCH AS EXCAVATORS, SHALL NOT BE UTILIZED IN THE RIVER OR WETLANDS, AND SHALL NOT TRAVEL BEYOND ACCESS ROADS/STAGING AREAS IDENTIFIED IN THESE PLANS.

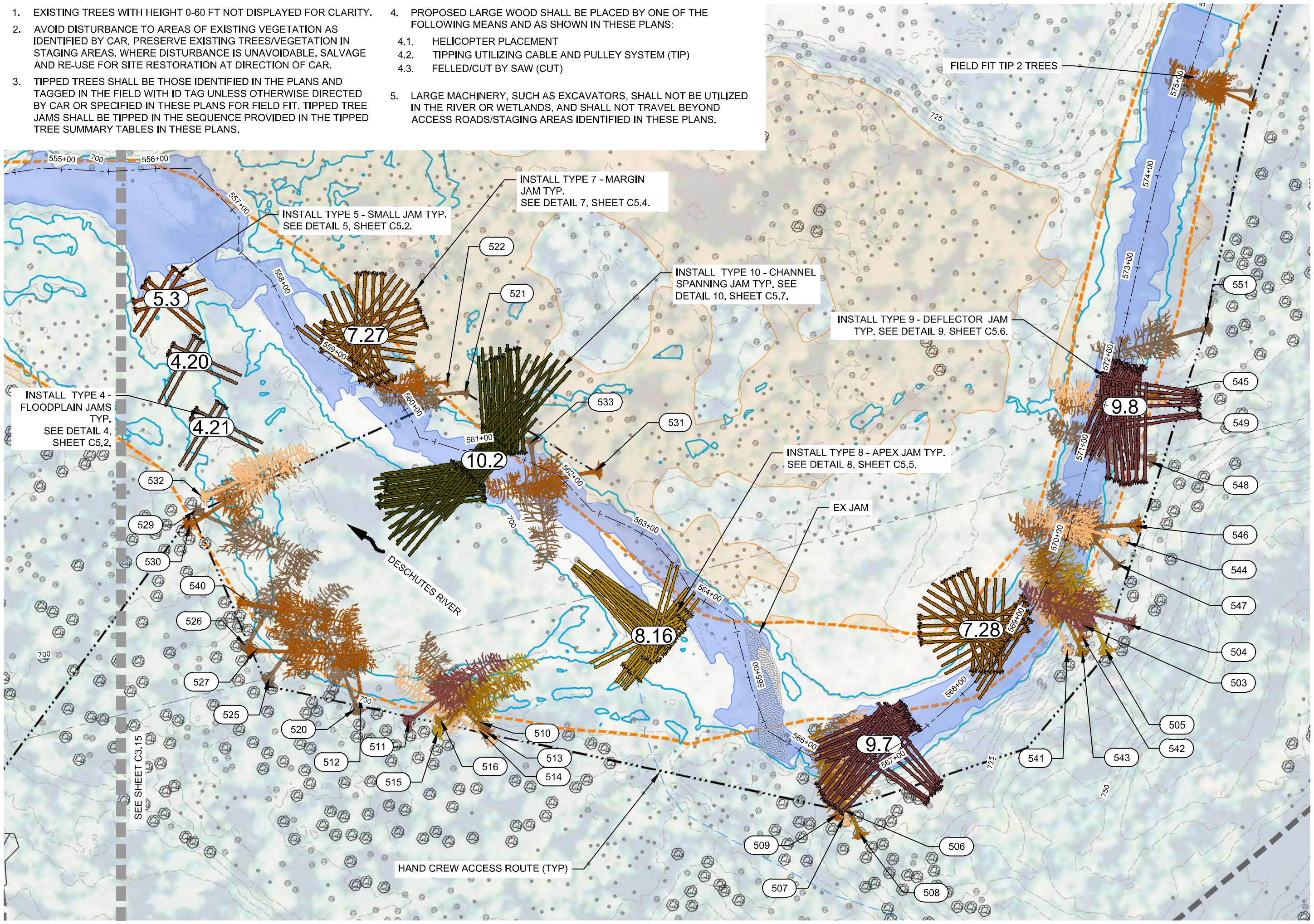
FIELD FIT TIP 2 TREES
INSTALL TYPE 7 - MARGIN JAM TYP. SEE DETAIL 7, SHEET C5.4.
INSTALL TYPE 5 - SMALL JAM TYP. SEE DETAIL 5, SHEET C5.2.
INSTALL TYPE 10 - CHANNEL SPANNING JAM TYP. SEE DETAIL 10, SHEET C5.7.
INSTALL TYPE 9 - DEFLECTOR JAM TYP. SEE DETAIL 9, SHEET C5.6.
INSTALL TYPE 4 - FLOODPLAIN JAMS TYP. SEE DETAIL 4, SHEET C5.2.
INSTALL TYPE 8 - APEX JAM TYP. SEE DETAIL 8, SHEET C5.5.
EX JAM
HAND CREW ACCESS ROUTE (TYP)
DESCHUTES RIVER
SEE SHEET C3.15
5.3
4.20
4.21
7.27
10.2
8.16
7.28
9.7
9.8
555+00
556+00
557+00
558+00
559+00
560+00
561+00
562+00
563+00
564+00
565+00
566+00
567+00
568+00
569+00
570+00
571+00
572+00
573+00
574+00
575+00
700
725
750
532
529
530
540
526
527
525
520
512
511
515
516
510
513
514
522
521
533
531
509
507
506
508
541
543
542
505
503
504
547
544
546
548
549
545
551

DESCHUTES RIVER PLAN - STA 555+00 TO 573+00

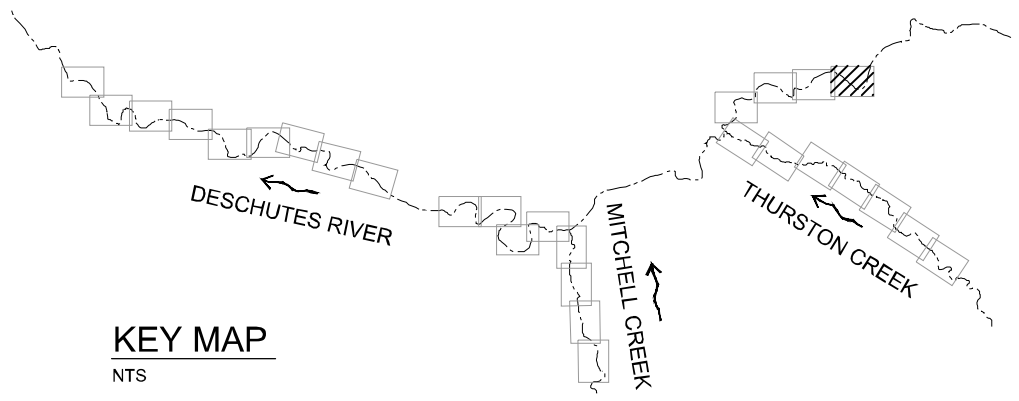
DESCHUTES RIVER
MITCHELL CREEK
THURSTON CREEK

KEY MAP
NTS

LEGEND:

- EXISTING CONTOUR - 5' INTERVAL
- EXISTING CONTOUR - 25' INTERVAL
- THURSTON COUNTY TAX LOTS
- EXISTING ACCESS ROADS
- FEMA 100-YEAR FLOODWAY
- FEMA 100-YEAR FLOODPLAIN
- TYPICAL LOW FLOW EXTENTS
- ORDINARY HIGH WATER
- EXISTING DRAINAGE
- STAGING/PARKING AREA
- HAND CREW ACCESS ROUTE
- EXISTING JAM FOOTPRINT
- EXISTING TREE (60-90 FT HEIGHT)
- EXISTING TREE (90-120 FT HEIGHT)
- EXISTING TREE (120-150 FT HEIGHT)
- EXISTING TREE (150-200 FT HEIGHT)

WHS LEGEND:

- ⓧ WHS TYPE
- XXX TREE ID
- LAYER 1 TIPPED TREE
- LAYER 2 TIPPED TREE
- LAYER 3 TIPPED TREE
- LAYER 4 TIPPED TREE
- LAYER 5 TIPPED TREE
- LAYER 6 TIPPED TREE
- LAYER 7 TIPPED TREE
- ▨ TRIBUTARY HELICOPTER WOOD PLACEMENT

N

SCALE
60 0 30 60 120
SCALE FEET

100% DESIGN
FEBRUARY 2026

TIPPED TREE SUMMARY

STA REFERENCE	TREE ID TAG #	BANK	AXN	SEQ	DBH RANGE	NOTES
558+70	532	LB	CUT	3	24-36"	
558+75	529	LB	CUT	1	24-36"	
558+75	530	LB	CUT	2	24-36"	
560+00	522	RB	CUT	2	<24"	
560+65	521	RB	CUT	1	24-36"	
560+70	540	LB	CUT	2	36-54"	
560+85	526	LB	CUT	1	<24"	
560+85	527	LB	CUT	2	<24"	
561+00	525	LB	CUT	1	<24"	
561+50	533	RB	CUT	1	24-36"	
562+20	531	RB	CUT	2	<24"	
562+25	520	LB	CUT	1	<24"	
562+25	512	LB	CUT	2	24-36"	
562+50	511	LB	CUT	6	<24"	
563+00	515	LB	CUT	5	<24"	
563+00	516	LB	CUT	4	<24"	
563+25	510	LB	CUT	1	24-36"	
563+25	513	LB	CUT	2	24-36"	
563+25	514	LB	CUT	3	<24"	
566+50	506	LB	TIP	1	<24"	
566+50	509	LB	TIP	2	<24"	
566+50	507	LB	TIP	3	<24"	
566+75	508	LB	TIP	4	24-36"	
568+95	541	LB	TIP	3	24-36"	
569+00	543	LB	TIP	4	<24"	
569+15	542	LB	TIP	2	<24"	
569+25	503	LB	TIP	1	24-36"	
569+25	505	LB	TIP	5	24-36"	
569+50	504	LB	TIP	6	<24"	
569+90	547	LB	TIP	1	24-36"	
570+15	544	LB	TIP	3	<24"	
570+40	546	LB	TIP	2	24-36"	
571+00	548	LB	TIP	1	24-36"	
571+70	549	LB	TIP	3	<24"	
571+80	545	LB	TIP	2	24-36"	
572+50	551	LB	TIP	1	24-36"	
575+00	-	LB	TIP	-	-	FIELD FIT TIP 2 TREES

HELICOPTER WOOD SUMMARY

STA REFERENCE	WHS TYPE	FULL TREE QTY	RACKING LOG QTY	NOTES
556+15	5.3	6	18	
558+25	4.20	4	12	
558+60	4.21	4	12	
559+00	7.27	30	42	
561+00	10.2	56	84	
563+50	8.16	34	72	
567+00	9.7	32	60	UTILIZE ALL TIPPED TREES AS BRACED COMPONENT, PLACE HELI WOOD ON TOP
568+50	7.28	30	42	
571+50	9.8	32	60	UTILIZE ALL TIPPED TREES AS BRACED COMPONENT, PLACE HELI WOOD ON TOP

STEVEN RODRIGUEZ
54824
PRELIMINARY NOT FOR CONSTRUCTION

WOLF WATER RESOURCES, INC.
1001 SE WATER AVE, SUITE #180
PORTLAND, OR 97214
503.207.6688

SOUTH PUGET SOUND SALMON
ENHANCEMENT GROUP
6700 MARTIN WAY E #112
OLYMPIA, WA 98516
360.412.0808

SOUTH PUGET SOUND SALMON ENHANCEMENT GROUP

UPPER DESCHUTES RIVER RESTORATION PROJECT

THURSTON COUNTY, WA

DESCHUTES RIVER PLAN - STA 555+00 TO 573+00

REVISION NUMBER

No.	Date	Revision

Date 2/20/2026	Designed By LE/SR
Drawn By LH/BF	Checked By SR/GL

SCALE
0 1"

JOB NO. 20220007

SHEET NO. C3.16

25 OF 58

DWG: Z:\Shared\W2r\CAD\20220007-Upper Deschutes Conceptual Design\DWG\SHEETS\C3.X - PLAN_1-5.dwg USER: bfasse
DATE: Feb 20, 2026 1:26am XREFS:X-TB-W2r-22x34 X-BASE-MAP X-CREEK X-PROJECT-UNITS X-EX-TREE X-STAGING X-WHS X-WET X-LEGEND X-KEY-MAP X-AERIAL_1-5 X-HAWS X-RAS_10YR-VELOCITY X-RAS_10YR-DEPTH X-PLANTING X-VP X-LOW-FLOW_INUNDATION

100% DESIGN
FEBRUARY 2026

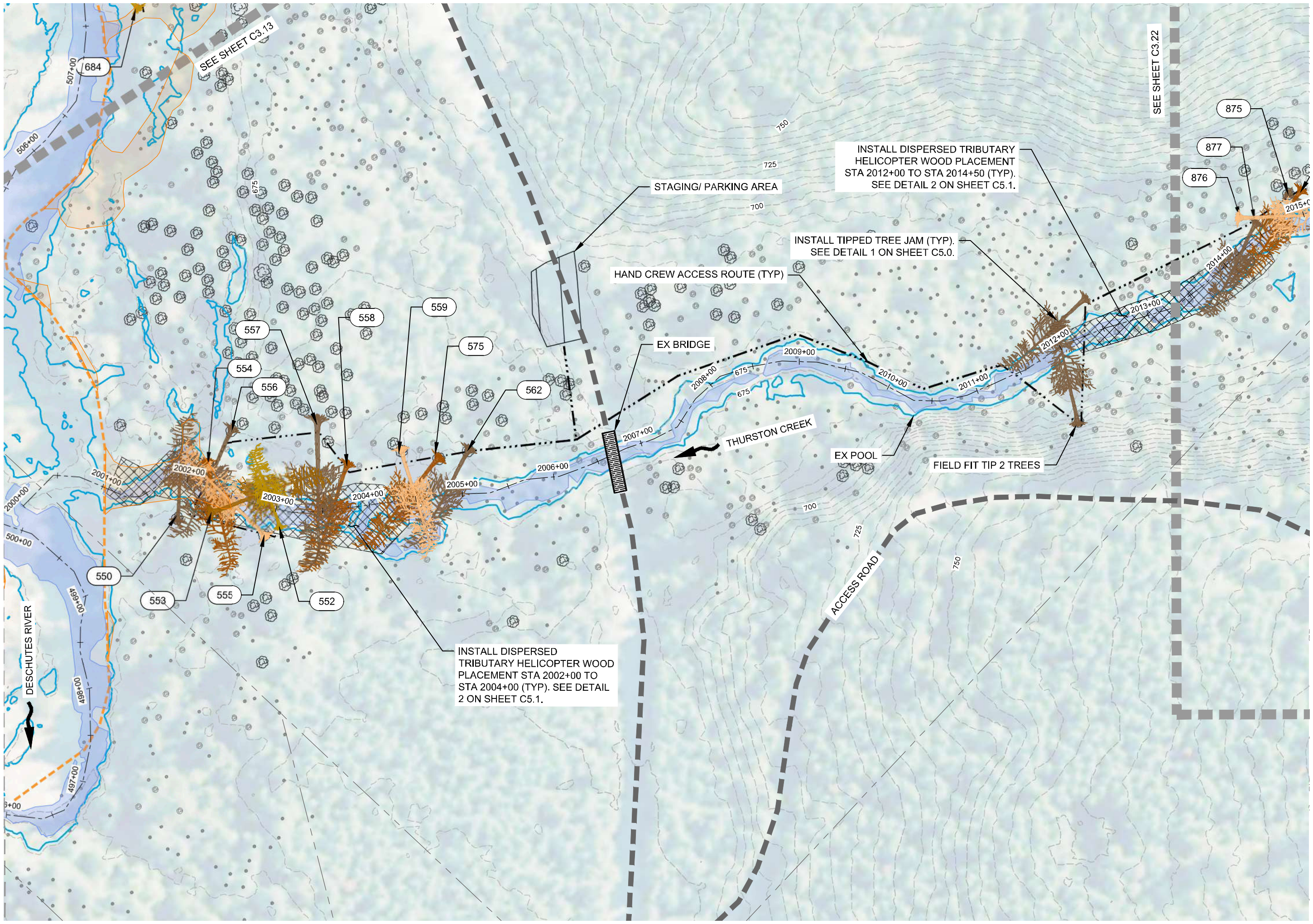
684
SEE SHEET C3.13
507+00
506+00
675
750
725
700
STAGING/ PARKING AREA
HAND CREW ACCESS ROUTE (TYP)
EX BRIDGE
557
554
556
558
559
575
562
2007+00
2002+00
2003+00
2004+00
2005+00
2006+00
2007+00
2008+00
2009+00
2010+00
2011+00
2012+00
2013+00
2014+00
2015+00
THURSTON CREEK
EX POOL
FIELD FIT TIP 2 TREES
INSTALL TIPPED TREE JAM (TYP). SEE DETAIL 1 ON SHEET C5.0.
INSTALL DISPERSED TRIBUTARY HELICOPTER WOOD PLACEMENT STA 2012+00 TO STA 2014+50 (TYP). SEE DETAIL 2 ON SHEET C5.1.
SEE SHEET C3.22
875
877
876
ACCESS ROAD
2000+00
500+00
499+00
498+00
497+00
DESCHUTES RIVER
550
553
555
552
INSTALL DISPERSED TRIBUTARY HELICOPTER WOOD PLACEMENT STA 2002+00 TO STA 2004+00 (TYP). SEE DETAIL 2 ON SHEET C5.1.

NOTES:

1. EXISTING TREES WITH HEIGHT 0-60 FT NOT DISPLAYED FOR CLARITY.
2. AVOID DISTURBANCE TO AREAS OF EXISTING VEGETATION AS IDENTIFIED BY CAR. PRESERVE EXISTING TREES/VEGETATION IN STAGING AREAS. WHERE DISTURBANCE IS UNAVOIDABLE, SALVAGE AND RE-USE FOR SITE RESTORATION AT DIRECTION OF CAR.
3. TIPPED TREES SHALL BE THOSE IDENTIFIED IN THE PLANS AND TAGGED IN THE FIELD WITH ID TAG UNLESS OTHERWISE DIRECTED BY CAR OR SPECIFIED IN THESE PLANS FOR FIELD FIT. TIPPED TREE JAMS SHALL BE TIPPED IN THE SEQUENCE PROVIDED IN THE TIPPED TREE SUMMARY TABLES IN THESE PLANS.
4. PROPOSED LARGE WOOD SHALL BE PLACED BY ONE OF THE FOLLOWING MEANS AND AS SHOWN IN THESE PLANS:
   - 4.1. HELICOPTER PLACEMENT
   - 4.2. TIPPING UTILIZING CABLE AND PULLEY SYSTEM (TIP)
   - 4.3. FELLED/CUT BY SAW (CUT)
5. LARGE MACHINERY, SUCH AS EXCAVATORS, SHALL NOT BE UTILIZED IN THE RIVER OR WETLANDS, AND SHALL NOT TRAVEL BEYOND ACCESS ROADS/STAGING AREAS IDENTIFIED IN THESE PLANS.
6. TIPPED TREE JAMS SHALL BE SUPPLEMENTED WITH FIELD FIT ALDER/DECIDUOUS TREES FELLED ON TOP OF OR WITIHIN THE JAM STRUCTURE AT THE DIRECTION OF THE CAR.

   THERE SHALL BE MIN 2 TIPPED DECIDUOUS TREES FIELD FIT TO SUPPLEMENT SURVEYED AND FIELD FIT CONIFERS.

TIPPED TREE SUMMARY

STA REFERENCE	TREE ID TAG #	BANK	AXN	SEQ	DBH RANGE	NOTES
2002+00	550	LB	TIP	1	24"-36"	
2002+15	554	RB	TIP	2	24"-36"	
2002+25	556	RB	TIP	1	24"-36"	
2002+40	553	LB	TIP	4	24"-36"	
2002+95	555	LB	TIP	3	24"-36"	
2003+05	552	LB	TIP	5	<24"	
2003+50	557	RB	TIP	1	24"-36"	
2003+80	558	RB	TIP	2	<24"	
2004+40	559	RB	TIP	3	24"-36"	
2004+80	575	RB	TIP	2	24"-36"	
2005+00	562	RB	TIP	1	24"-36"	
2012+00	-	MIX	CUT	-	-	FIELD FIT TIP 2 TREES
2001+00 - 2013+00	-	MIX	CUT	-	-	TIP 2 ALDERS FOR EVERY TIPPED CONIFER (26 TOTAL) SEE NOTE 6

HELICOPTER WOOD SUMMARY

STA REFERENCE	WHS TYPE	FULL TREE QTY	RACKING LOG QTY	NOTES
2002+00 - 2004+00	2	4	12	INSTALL AT HEAD OF EX BAR
2012+00 - 2014+50	2	4	12	

THURSTON CREEK PLAN - STA 2000+00 TO 2014+00


SCALE
60
0
30
60
120
SCALE
FEET
N

LEGEND:

EXISTING CONTOUR - 5' INTERVAL
EXISTING CONTOUR - 25' INTERVAL
THURSTON COUNTY TAX LOTS
EXISTING ACCESS ROADS
FEMA 100-YEAR FLOODWAY
FEMA 100-YEAR FLOODPLAIN
TYPICAL LOW FLOW EXTENTS
ORDINARY HIGH WATER
EXISTING DRAINAGE
STAGING/PARKING AREA
HAND CREW ACCESS ROUTE
EXISTING JAM FOOTPRINT
EXISTING TREE (60-90 FT HEIGHT)
EXISTING TREE (90-120 FT HEIGHT)
EXISTING TREE (120-150 FT HEIGHT)
EXISTING TREE (150-200 FT HEIGHT)

WHS LEGEND:

(X)	WHS TYPE
XXX	TREE ID
	LAYER 1 TIPPED TREE
	LAYER 2 TIPPED TREE
	LAYER 3 TIPPED TREE
	LAYER 4 TIPPED TREE
	LAYER 5 TIPPED TREE
	LAYER 6 TIPPED TREE
	LAYER 7 TIPPED TREE
▨	TRIBUTARY HELICOPTER WOOD PLACEMENT

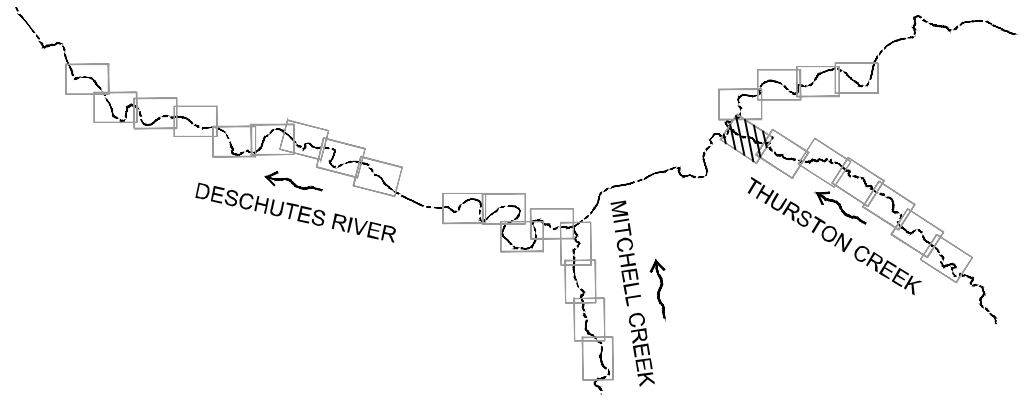
DESCHUTES RIVER
MITCHELL CREEK
THURSTON CREEK

KEY MAP
NTS

PRELIMINARY NOT FOR CONSTRUCTION

STEVEN RODRIGUEZ 54824

WOLF WATER RESOURCES, INC.
1001 SE WATER AVE, SUITE #180
PORTLAND, OR 97214
503.207.6688

SOUTH PUGET SOUND SALMON
ENHANCEMENT GROUP
6700 MARTIN WAY E #112
OLYMPIA, WA 98516
360.412.0808

SOUTH PUGET SOUND SALMON
ENHANCEMENT GROUP
UPPER DESCHUTES RIVER
RESTORATION PROJECT
THURSTON COUNTY, WA

THURSTON CREEK
PLAN - STA
2000+00 TO
2014+00

REVISION NUMBER

No.	Date	Revision

Date 2/19/2026	Designed By LE/SR
Drawn By LH/BF	Checked By SR/GL

SCALE 0 1"

JOB NO. 20220007

SHEET NO. C3.21
30 OF 58

DWG: Z:\Shared\W2r\CAD\20220007-Upper Deschutes Conceptual Design\DWG\SHEETS\C3.X - PLAN_THURSTON.dwg USER: lhamilton
DATE: Feb 19, 2026 10:44pm XREFS:X-TB-W2r-22x34 X-CREEK X-PROJECT-UNITS X-EX-TREE X-STAGING X-WHS X-WET X-LEGEND X-KEY-MAP X-AERIAL_1-5 X-HAWS X-VP X-LOW-FLOW_INUNDATION X-BASE-MAP

100% DESIGN
FEBRUARY 2026

NOTES:

1. EXISTING TREES WITH HEIGHT 0-60 FT NOT DISPLAYED FOR CLARITY.
2. AVOID DISTURBANCE TO AREAS OF EXISTING VEGETATION AS IDENTIFIED BY CAR. PRESERVE EXISTING TREES/VEGETATION IN STAGING AREAS. WHERE DISTURBANCE IS UNAVOIDABLE, SALVAGE AND RE-USE FOR SITE RESTORATION AT DIRECTION OF CAR.
3. TIPPED TREES SHALL BE THOSE IDENTIFIED IN THE PLANS AND TAGGED IN THE FIELD WITH ID TAG UNLESS OTHERWISE DIRECTED BY CAR OR SPECIFIED IN THESE PLANS FOR FIELD FIT. TIPPED TREE JAMS SHALL BE TIPPED IN THE SEQUENCE PROVIDED IN THE TIPPED TREE SUMMARY TABLES IN THESE PLANS.
4. PROPOSED LARGE WOOD SHALL BE PLACED BY ONE OF THE FOLLOWING MEANS AND AS SHOWN IN THESE PLANS:
   - 4.1. HELICOPTER PLACEMENT
   - 4.2. TIPPING UTILIZING CABLE AND PULLEY SYSTEM (TIP)
   - 4.3. FELLED/CUT BY SAW (CUT)
5. LARGE MACHINERY, SUCH AS EXCAVATORS, SHALL NOT BE UTILIZED IN THE RIVER OR WETLANDS, AND SHALL NOT TRAVEL BEYOND ACCESS ROADS/STAGING AREAS IDENTIFIED IN THESE PLANS.
6. TIPPED TREE JAMS SHALL BE SUPPLEMENTED WITH FIELD FIT ALDER/DECIDUOUS TREES FELLED ON TOP OF OR WITIHIN THE JAM STRUCTURE AT THE DIRECTION OF THE CAR.

   THERE SHALL BE MIN 2 TIPPED DECIDUOUS TREES FIELD FIT TO SUPPLEMENT SURVEYED AND FIELD FIT CONIFERS.

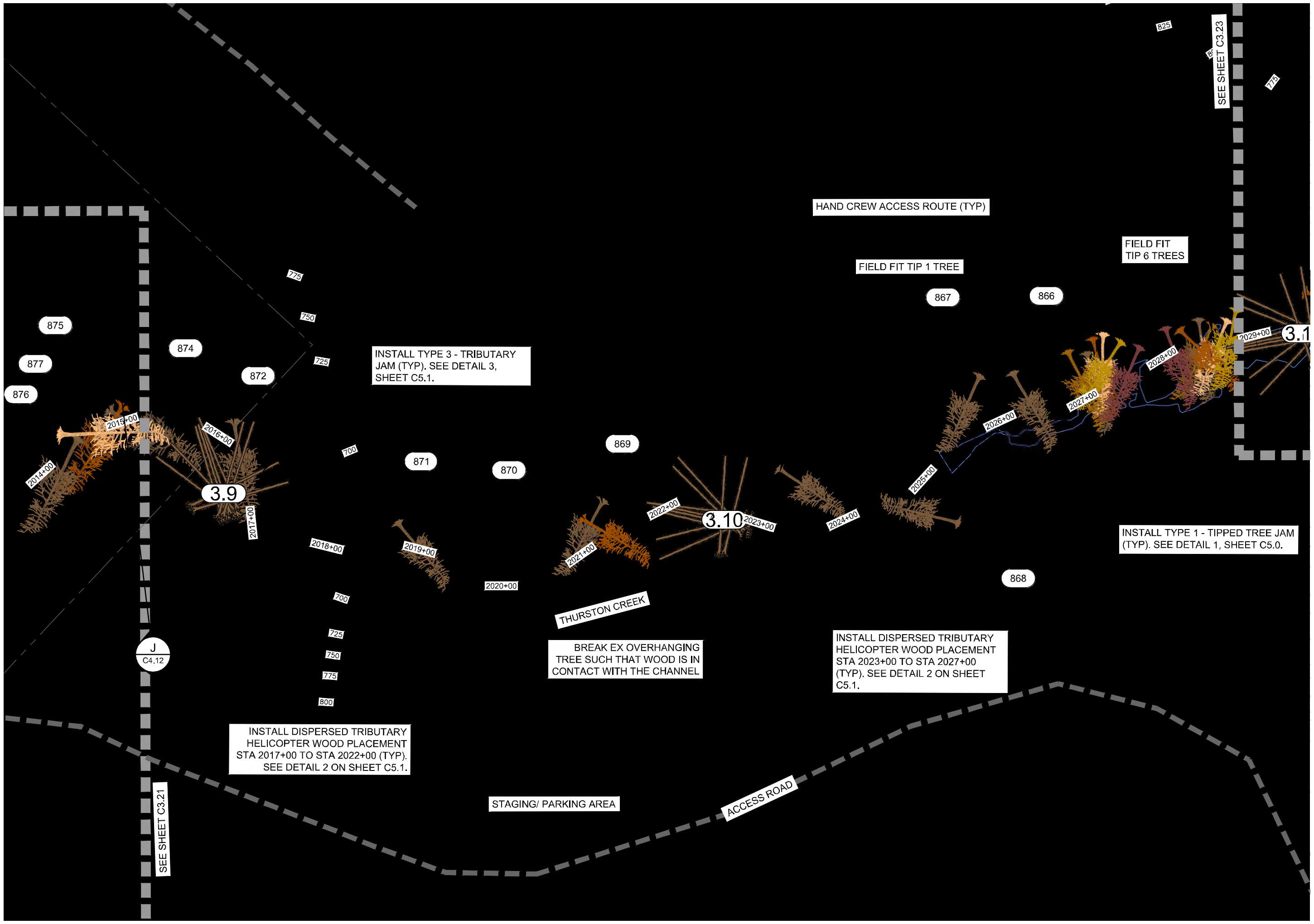
SEE SHEET C3.23
SEE SHEET C3.21
HAND CREW ACCESS ROUTE (TYP)
FIELD FIT TIP 1 TREE
FIELD FIT
TIP 6 TREES
INSTALL TYPE 3 - TRIBUTARY JAM (TYP). SEE DETAIL 3, SHEET C5.1.
INSTALL TYPE 1 - TIPPED TREE JAM (TYP). SEE DETAIL 1, SHEET C5.0.
INSTALL DISPERSED TRIBUTARY HELICOPTER WOOD PLACEMENT STA 2023+00 TO STA 2027+00 (TYP). SEE DETAIL 2 ON SHEET C5.1.
INSTALL DISPERSED TRIBUTARY HELICOPTER WOOD PLACEMENT STA 2017+00 TO STA 2022+00 (TYP). SEE DETAIL 2 ON SHEET C5.1.
BREAK EX OVERHANGING TREE SUCH THAT WOOD IS IN CONTACT WITH THE CHANNEL
THURSTON CREEK
STAGING/ PARKING AREA
ACCESS ROAD
J
C4.12
3.9
3.10
3.1
875
877
876
874
872
871
870
869
868
867
866
825
775
750
725
700
800
2014+00
2015+00
2016+00
2017+00
2018+00
2019+00
2020+00
2021+00
2022+00
2023+00
2024+00
2025+00
2026+00
2027+00
2028+00
2029+00

THURSTON CREEK PLAN - STA 2014+00 TO 2029+00

SCALE

60 0 30 60 120
SCALE FEET

TIPPED TREE SUMMARY

STA REFERENCE	TREE ID TAG #	BANK	AXN	SEQ	DBH RANGE	NOTES
2014+50	877	RB	CUT	1	<24"	
2014+50	876	RB	CUT	3	<24"	
2014+90	875	RB	CUT	1	<24"	
2015+00	874	RB	CUT	2	<24"	
2016+00	872	RB	CUT	1	<24"	
2018+75	871	RB	CUT	1	<24"	
2021+15	870	RB	CUT	2	<24"	
2021+40	869	RB	CUT	1	24"-36"	
2023+50	-	RB	CUT	-	-	TIP 1 FIR, IF NOT FEASIBLE
2025+00	868	LB	CUT	1	24"-36"	
2026+00	867	RB	CUT	1	24"-36"	
2026+75	866	RB	CUT	1	<24"	
2027+20	-	RB	CUT	-	-	BIG STAND OF EX FIRS, FIELD FIT TIP ~6 TREES
2028+40	-	RB	CUT	-	-	BIG STAND OF EX FIRS, FIELD FIT TIP ~6 TREES
2013+00 - 2029+00	-	MIX	CUT	-	-	TIP 2 ALDERS FOR EVERY TIPPED CONIFER (48 TOTAL) SEE NOTE 6

HELICOPTER WOOD SUMMARY

STA REFERENCE	WHS TYPE	FULL TREE QTY	RACKING LOG QTY	NOTES
2016+50	3.9	10	24	
2017+00 - 2022+00	2	10	30	
2022+50	3.10	10	24	
2023+00 - 2027+00	2	8	24	

LEGEND:

- EXISTING CONTOUR - 5' INTERVAL
- EXISTING CONTOUR - 25' INTERVAL
- THURSTON COUNTY TAX LOTS
- EXISTING ACCESS ROADS
- FEMA 100-YEAR FLOODWAY
- FEMA 100-YEAR FLOODPLAIN
- TYPICAL LOW FLOW EXTENTS
- ORDINARY HIGH WATER
- EXISTING DRAINAGE
- STAGING/PARKING AREA
- HAND CREW ACCESS ROUTE
- EXISTING JAM FOOTPRINT
- EXISTING TREE (60-90 FT HEIGHT)
- EXISTING TREE (90-120 FT HEIGHT)
- EXISTING TREE (120-150 FT HEIGHT)
- EXISTING TREE (150-200 FT HEIGHT)

WHS LEGEND:

Ⓧ	WHS TYPE
XXX	TREE ID
	LAYER 1 TIPPED TREE
	LAYER 2 TIPPED TREE
	LAYER 3 TIPPED TREE
	LAYER 4 TIPPED TREE
	LAYER 5 TIPPED TREE
	LAYER 6 TIPPED TREE
	LAYER 7 TIPPED TREE
▨	TRIBUTARY HELICOPTER WOOD PLACEMENT

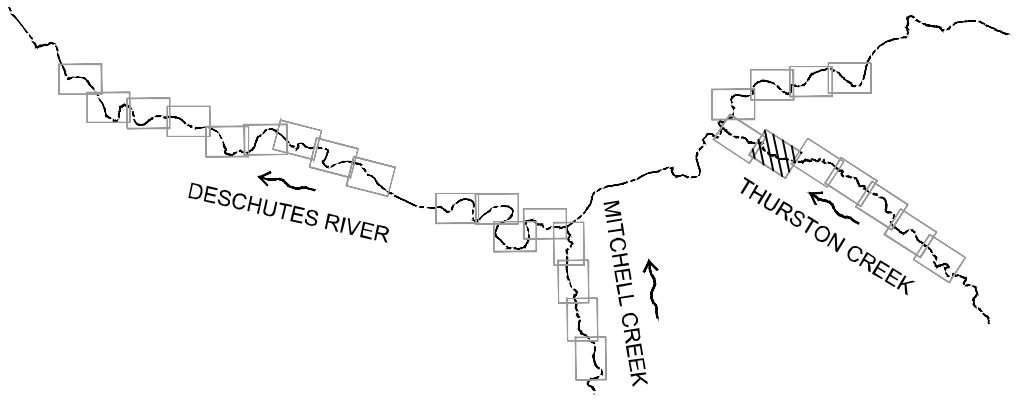
DESCHUTES RIVER
MITCHELL CREEK
THURSTON CREEK

KEY MAP

NTS

STEVEN RODRIGUEZ
PRELIMINARY NOT FOR CONSTRUCTION

WOLF WATER RESOURCES, INC.
1001 SE WATER AVE, SUITE #180
PORTLAND, OR 97214
503.207.6688

SOUTH PUGET SOUND SALMON
ENHANCEMENT GROUP
6700 MARTIN WAY E #112
OLYMPIA, WA 98516
360.412.0808

SOUTH PUGET SOUND SALMON
ENHANCEMENT GROUP

UPPER DESCHUTES RIVER RESTORATION PROJECT

THURSTON COUNTY, WA

THURSTON CREEK PLAN - STA 2014+00 TO 2029+00

REVISION NUMBER

No.	Date	Revision

Date 2/19/2026	Designed By LE/SR
Drawn By LH/BF	Checked By SR/GL

SCALE 0 1"

JOB NO. 20220007

SHEET NO. C3.22

31 OF 58

DWG: Z:\Shared\W2r\CAD\20220007-Upper Deschutes Conceptual Design\DWG\SHEETS\C3.X - PLAN_THURSTON.dwg USER: lhamilton
DATE: Feb 19, 2026 11:45pm XREFS: X-TB-W2r-22x34 X-CREEK X-PROJECT-UNITS X-EX-TREE X-STAGING X-WHS X-WET X-LEGEND X-KEY-MAP X-AERIAL_1-5 X-HAWS X-VP X-LOW-FLOW_INUNDATION X-BASE-MAP

100% DESIGN
FEBRUARY 2026

NOTES:

1. EXISTING TREES WITH HEIGHT 0-60 FT NOT DISPLAYED FOR CLARITY.
2. AVOID DISTURBANCE TO AREAS OF EXISTING VEGETATION AS IDENTIFIED BY CAR. PRESERVE EXISTING TREES/VEGETATION IN STAGING AREAS. WHERE DISTURBANCE IS UNAVOIDABLE, SALVAGE AND RE-USE FOR SITE RESTORATION AT DIRECTION OF CAR.
3. TIPPED TREES SHALL BE THOSE IDENTIFIED IN THE PLANS AND TAGGED IN THE FIELD WITH ID TAG UNLESS OTHERWISE DIRECTED BY CAR OR SPECIFIED IN THESE PLANS FOR FIELD FIT. TIPPED TREE JAMS SHALL BE TIPPED IN THE SEQUENCE PROVIDED IN THE TIPPED TREE SUMMARY TABLES IN THESE PLANS.
4. PROPOSED LARGE WOOD SHALL BE PLACED BY ONE OF THE FOLLOWING MEANS AND AS SHOWN IN THESE PLANS:
   - 4.1. HELICOPTER PLACEMENT
   - 4.2. TIPPING UTILIZING CABLE AND PULLEY SYSTEM (TIP)
   - 4.3. FELLED/CUT BY SAW (CUT)
5. LARGE MACHINERY, SUCH AS EXCAVATORS, SHALL NOT BE UTILIZED IN THE RIVER OR WETLANDS, AND SHALL NOT TRAVEL BEYOND ACCESS ROADS/STAGING AREAS IDENTIFIED IN THESE PLANS.
6. TIPPED TREE JAMS SHALL BE SUPPLEMENTED WITH FIELD FIT ALDER/DECIDUOUS TREES FELLED ON TOP OF OR WITIHIN THE JAM STRUCTURE AT THE DIRECTION OF THE CAR.

   THERE SHALL BE MIN 2 TIPPED DECIDUOUS TREES FIELD FIT TO SUPPLEMENT SURVEYED AND FIELD FIT CONIFERS.

TIPPED TREE SUMMARY

STA REFERENCE	TREE ID TAG #	BANK	AXN	SEQ	DBH RANGE	NOTES
2030+20	-	RB	CUT	-	-	FIELD FIT TIP 4 FIRS
2030+60	-	LB	CUT	1	-	FIELD FIT TIP 1 TREE
2030+90	865	RB	CUT	2	<24"	
2031+40	864	RB	CUT	3	<24"	
2031+50	863	RB	CUT	2	<24"	
2032+50	-	LB	CUT	1		FIELD FIT TIP 1 TREE
2034+30	-	RB	CUT	-	-	FIELD FIT TIP 3 TREES
2035+90	-	RB	CUT	-	-	FIELD FIT TIP 1-2 TREES
2037+40	-	LB	CUT	-	-	FIELD FIT TIP 1 TREE
2041+55	-	RB	CUT	-	-	FIELD FIT TIP 2 TREES
2043+00	862	RB	CUT	1	24"-36"	
2044+75	-	RB	CUT	-	-	FIELD FIT TIP 3 TREES
2045+00	-	RB	CUT	-	-	FIELD FIT TIP 3-4 TREES
2029+00 - 2045+00	-	MIX	CUT	-	-	TIP 2 ALDERS FOR EVERY TIPPED CONIFER (50 TOTAL) SEE NOTE 6

HELICOPTER WOOD SUMMARY

STA REFERENCE	WHS TYPE	FULL TREE QTY	RACKING LOG QTY	NOTES
2029+00	3.11	10	24	
2033+00	3.12	10	24	
2034+00 - 2044+00	2	20	60	ACTIVATE LEFT FLOODPLAIN

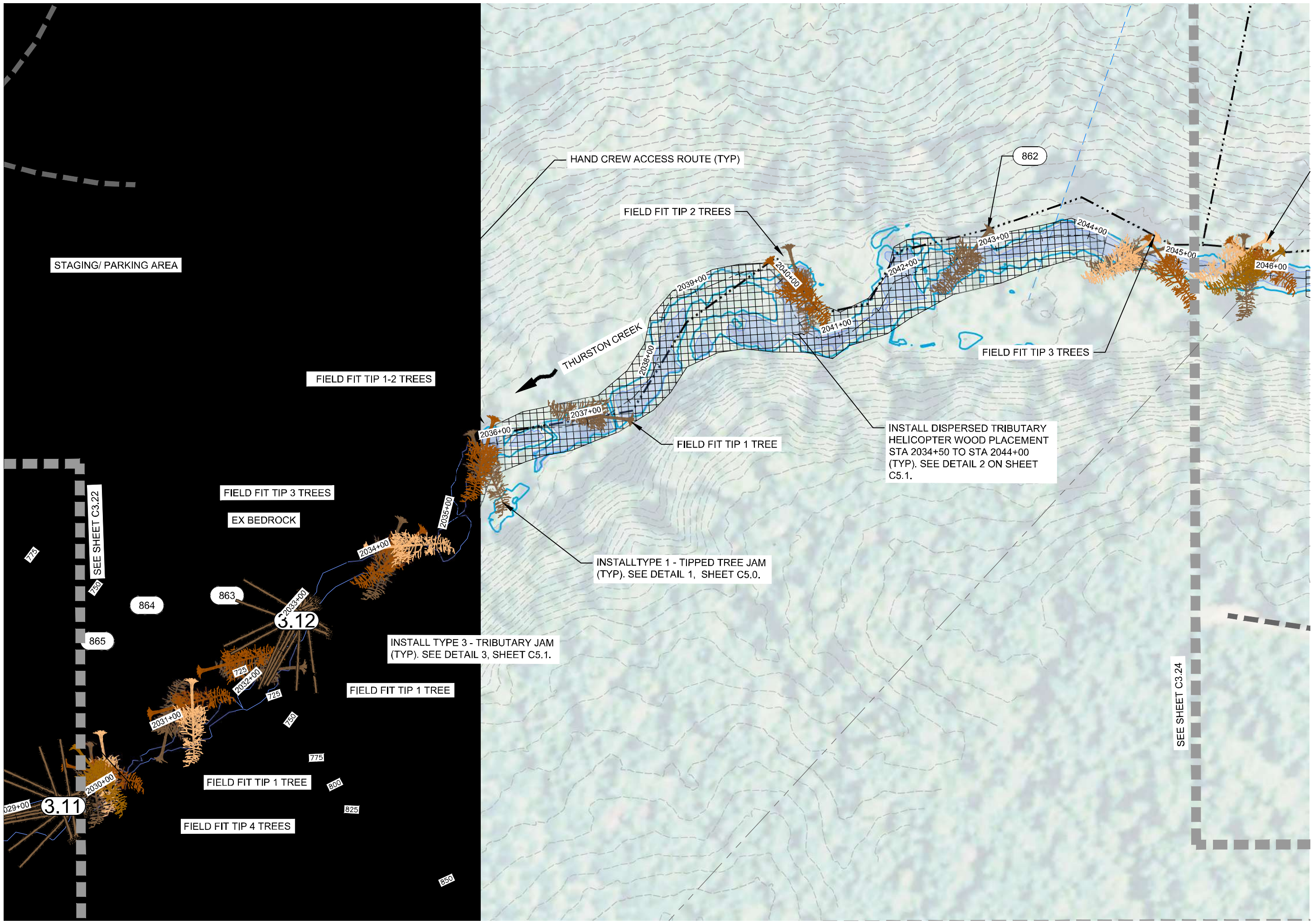
STAGING/ PARKING AREA
HAND CREW ACCESS ROUTE (TYP)
FIELD FIT TIP 2 TREES
862
FIELD FIT TIP 1-2 TREES
THURSTON CREEK
FIELD FIT TIP 3 TREES
EX BEDROCK
FIELD FIT TIP 1 TREE
INSTALL DISPERSED TRIBUTARY HELICOPTER WOOD PLACEMENT STA 2034+50 TO STA 2044+00 (TYP). SEE DETAIL 2 ON SHEET C5.1.
FIELD FIT TIP 3 TREES
SEE SHEET C3.22
SEE SHEET C3.24
864
863
865
3.12
3.11
INSTALLTYPE 1 - TIPPED TREE JAM (TYP). SEE DETAIL 1, SHEET C5.0.
INSTALL TYPE 3 - TRIBUTARY JAM (TYP). SEE DETAIL 3, SHEET C5.1.
FIELD FIT TIP 1 TREE
FIELD FIT TIP 1 TREE
FIELD FIT TIP 4 TREES
2029+00
2030+00
2031+00
2032+00
2033+00
2034+00
2035+00
2036+00
2037+00
2038+00
2039+00
2040+00
2041+00
2042+00
2043+00
2044+00
2045+00
2046+00
725
750
775
800
825
850

THURSTON CREEK PLAN - STA 2029+00 TO 2046+00

SCALE

60 0 30 60 120
SCALE FEET

LEGEND:

EXISTING CONTOUR - 5' INTERVAL
EXISTING CONTOUR - 25' INTERVAL
THURSTON COUNTY TAX LOTS
EXISTING ACCESS ROADS
FEMA 100-YEAR FLOODWAY
FEMA 100-YEAR FLOODPLAIN
TYPICAL LOW FLOW EXTENTS
ORDINARY HIGH WATER
EXISTING DRAINAGE
STAGING/PARKING AREA
HAND CREW ACCESS ROUTE
EXISTING JAM FOOTPRINT
EXISTING TREE (60-90 FT HEIGHT)
EXISTING TREE (90-120 FT HEIGHT)
EXISTING TREE (120-150 FT HEIGHT)
EXISTING TREE (150-200 FT HEIGHT)

WHS LEGEND:

Ⓧ WHS TYPE
XXX TREE ID
LAYER 1 TIPPED TREE
LAYER 2 TIPPED TREE
LAYER 3 TIPPED TREE
LAYER 4 TIPPED TREE
LAYER 5 TIPPED TREE
LAYER 6 TIPPED TREE
LAYER 7 TIPPED TREE
▨ TRIBUTARY HELICOPTER WOOD PLACEMENT

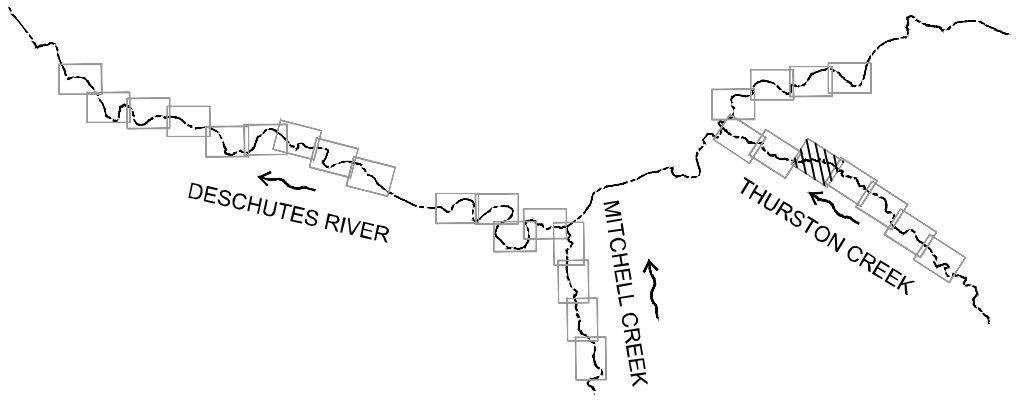
DESCHUTES RIVER
MITCHELL CREEK
THURSTON CREEK

KEY MAP

NTS

STEVEN RODRIGUEZ
PRELIMINARY NOT FOR CONSTRUCTION

WOLF WATER RESOURCES, INC.
1001 SE WATER AVE, SUITE #180
PORTLAND, OR 97214
503.207.6688

SOUTH PUGET SOUND SALMON ENHANCEMENT GROUP
6700 MARTIN WAY E #112
OLYMPIA, WA 98516
360.412.0808

SOUTH PUGET SOUND SALMON ENHANCEMENT GROUP

UPPER DESCHUTES RIVER RESTORATION PROJECT

THURSTON COUNTY, WA

THURSTON CREEK PLAN - STA 2029+00 TO 2046+00

REVISION NUMBER

No.	Date	Revision

Date 2/20/2026	Designed By LE/SR
Drawn By LH/BF	Checked By SR/GL

SCALE 0 1"

JOB NO. 20220007

SHEET NO. C3.23

32 OF 58

DWG: Z:\Shared\W2r\CAD\20220007-Upper Deschutes Conceptual Design\DWG\SHEETS\C3.X - PLAN_THURSTON.dwg USER: lhamilton
DATE: Feb 20, 2026 12:48am XREFS: X-TB-W2r-22x34 X-CREEK X-PROJECT-UNITS X-EX-TREE X-STAGING X-WHS X-WET X-LEGEND X-KEY-MAP X-AERIAL_1-5 X-HAWS X-VP X-LOW-FLOW_INUNDATION X-BASE-MAP